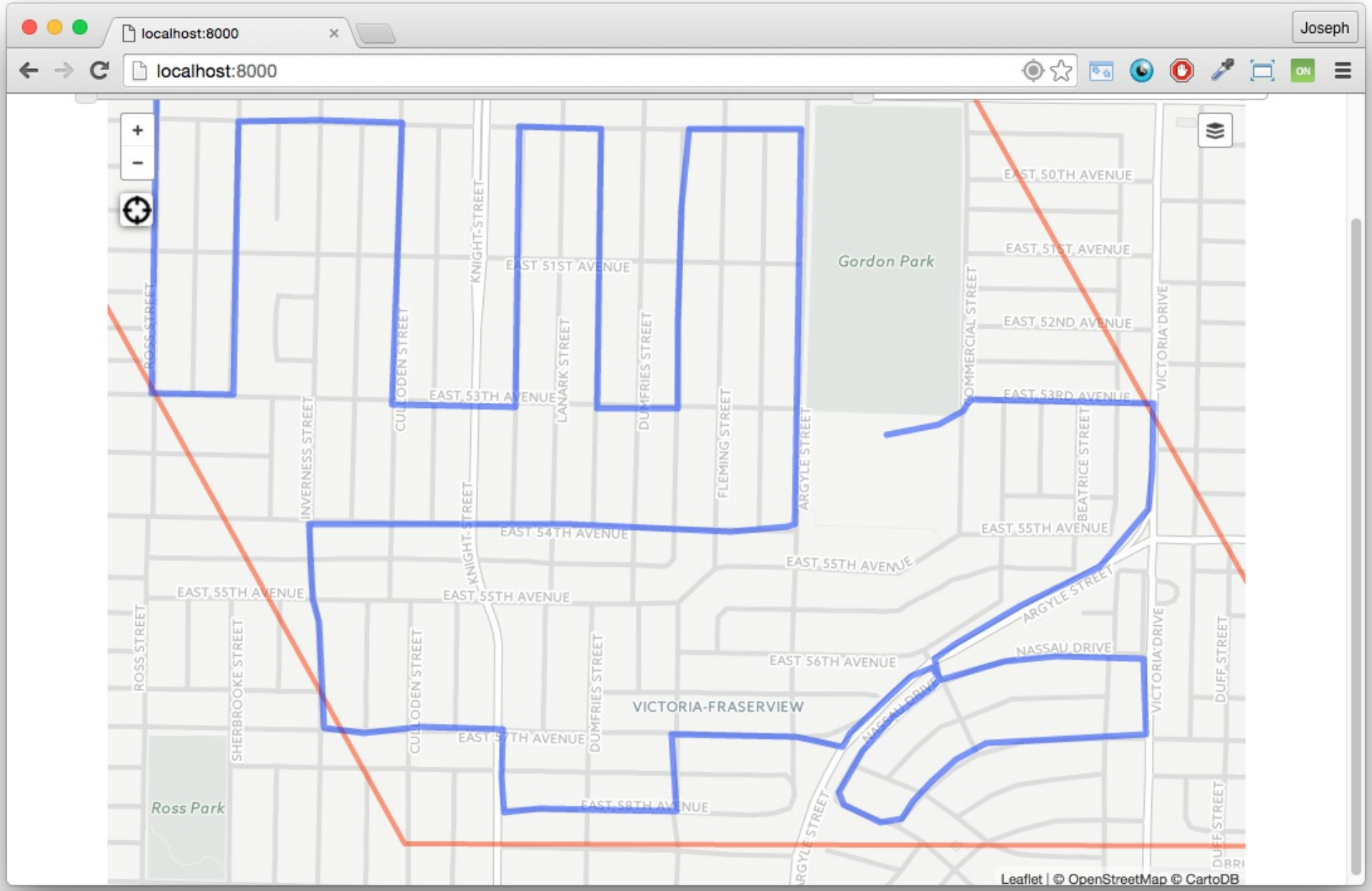
localhost:8000
Joseph
localhost:8000
Gordon Park
EAST 50TH AVENUE
EAST 51ST AVENUE
EAST 52ND AVENUE
EAST 53RD AVENUE
EAST 53TH AVENUE
EAST 54TH AVENUE
EAST 55TH AVENUE
EAST 56TH AVENUE
EAST 57TH AVENUE
EAST 58TH AVENUE
KNIGHT STREET
ROSS STREET
INVERNESS STREET
CULLODEN STREET
LANARK STREET
DUMFRIES STREET
FLEMING STREET
ARGYLE STREET
COMMERCIAL STREET
BEATRICE STREET
VICTORIA DRIVE
NASSAU DRIVE
DUFF STREET
SHERBROOKE STREET
VICTORIA-FRASERVIEW
Ross Park
Leaflet | © OpenStreetMap © CartoDB

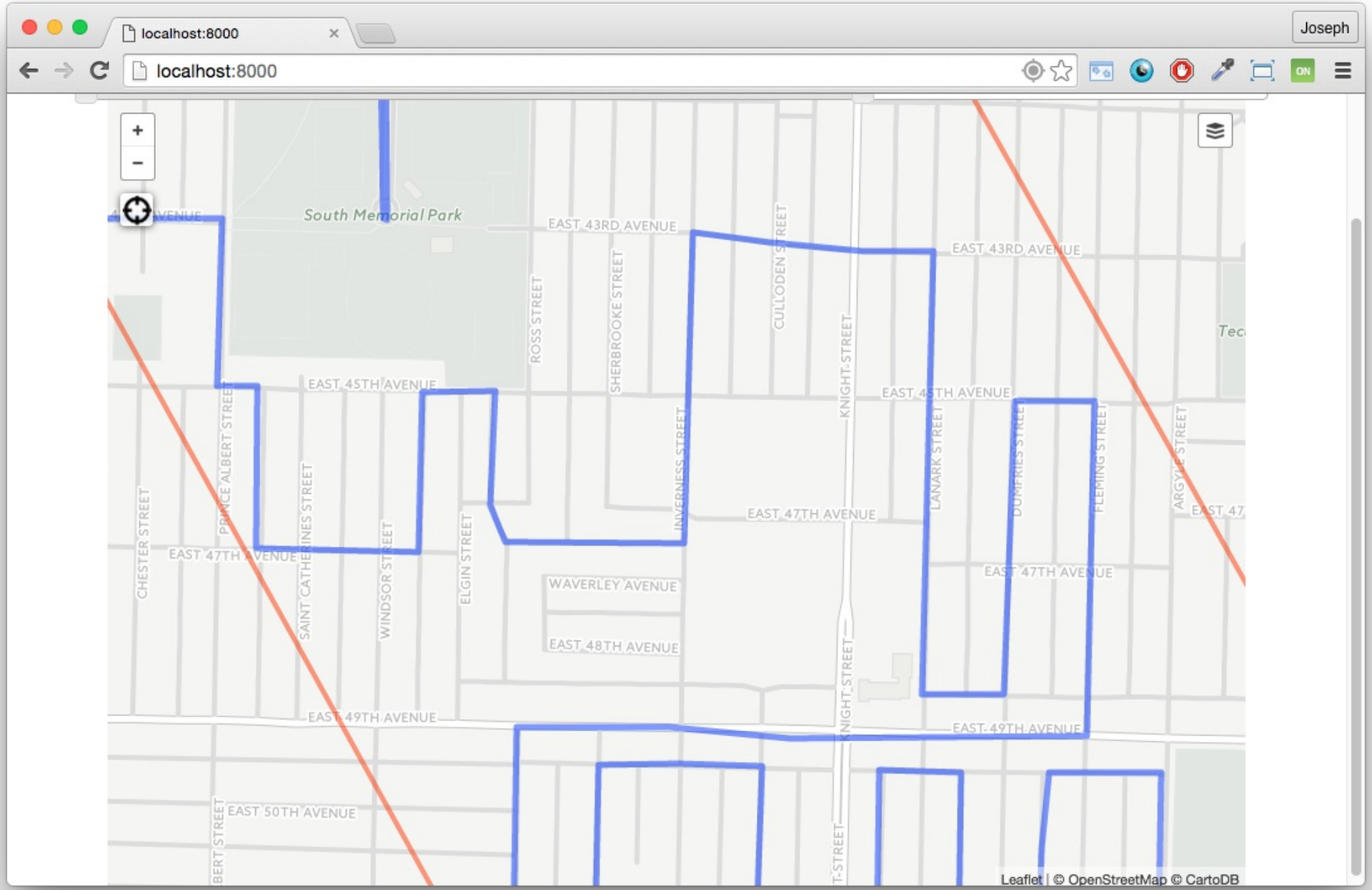
localhost:8000
Joseph
localhost:8000
South Memorial Park
EAST 43RD AVENUE
EAST 45TH AVENUE
EAST 47TH AVENUE
EAST 48TH AVENUE
EAST 49TH AVENUE
EAST 50TH AVENUE
WAVERLEY AVENUE
ROSS STREET
SHERBROOKE STREET
CULLODEN STREET
KNIGHT STREET
INVERNESS STREET
LANARK STREET
FLEMING STREET
CHESTER STREET
PRINCE ALBERT STREET
SAINT CATHERINES STREET
WINDSOR STREET
ELGIN STREET
Leaflet | © OpenStreetMap © CartoDB

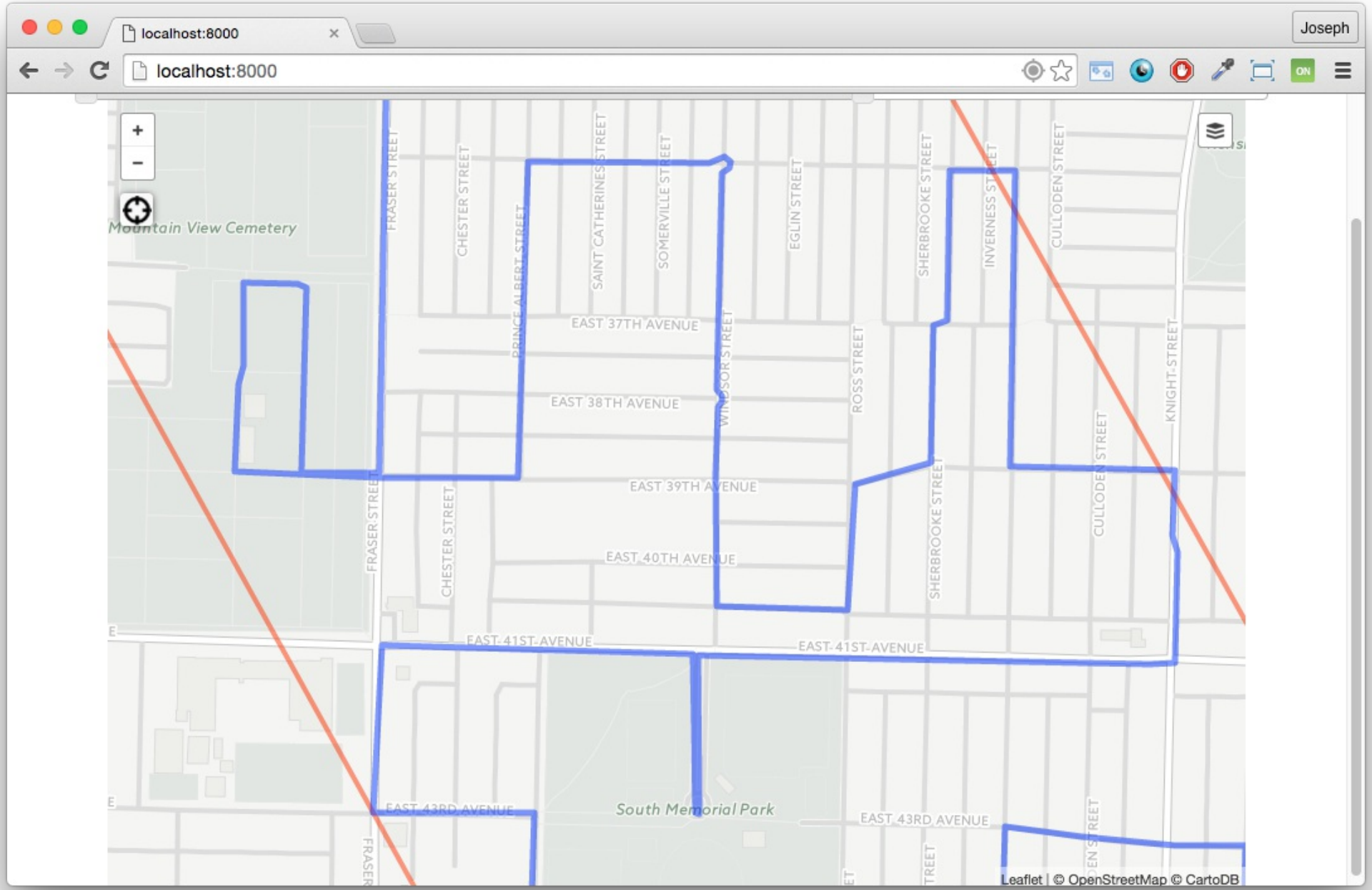
localhost:8000
Joseph
localhost:8000
Mountain View Cemetery
FRASER STREET
CHESTER STREET
PRINCE ALBERT STREET
SAINT CATHERINES STREET
SOMERVILLE STREET
EGLIN STREET
SHERBROOKE STREET
INVERNESS STREET
CULLODEN STREET
KNIGHT STREET
WINDSOR STREET
ROSS STREET
EAST 37TH AVENUE
EAST 38TH AVENUE
EAST 39TH AVENUE
EAST 40TH AVENUE
EAST 41ST AVENUE
EAST 43RD AVENUE
South Memorial Park
Leaflet | © OpenStreetMap © CartoDB

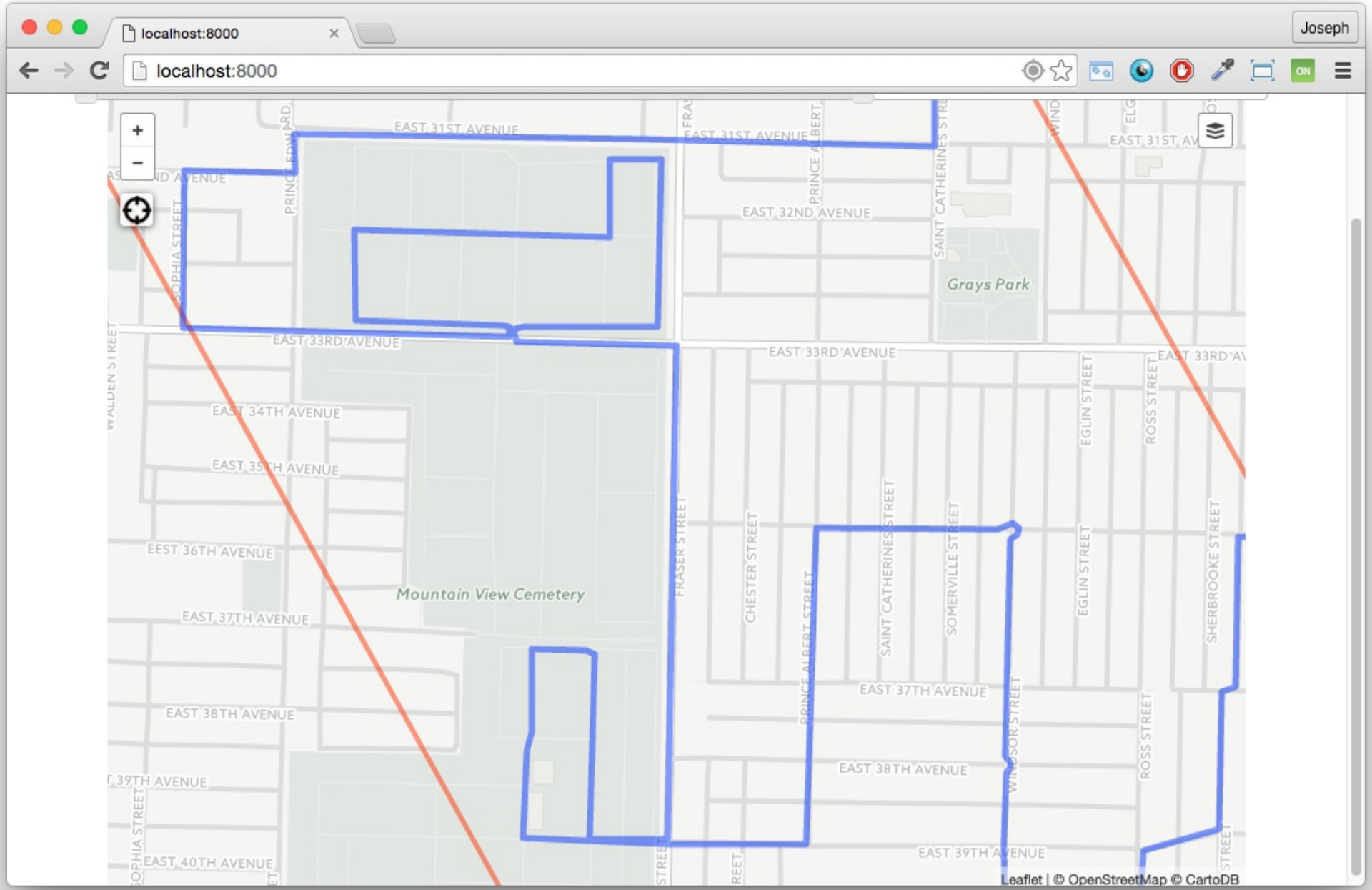
localhost:8000
Joseph
localhost:8000
EAST 31ST AVENUE
EAST 32ND AVENUE
EAST 33RD AVENUE
EAST 34TH AVENUE
EAST 35TH AVENUE
EEST 36TH AVENUE
EAST 37TH AVENUE
EAST 38TH AVENUE
EAST 39TH AVENUE
EAST 40TH AVENUE
PRINCE EDWARD
PRINCE ALBERT
SAINT CATHERINES STREET
SOPHIA STREET
WALDEN STREET
FRASER STREET
CHESTER STREET
SOMERVILLE STREET
EGLIN STREET
ROSS STREET
SHERBROOKE STREET
WINDSOR STREET
Grays Park
Mountain View Cemetery
Leaflet | © OpenStreetMap © CartoDB

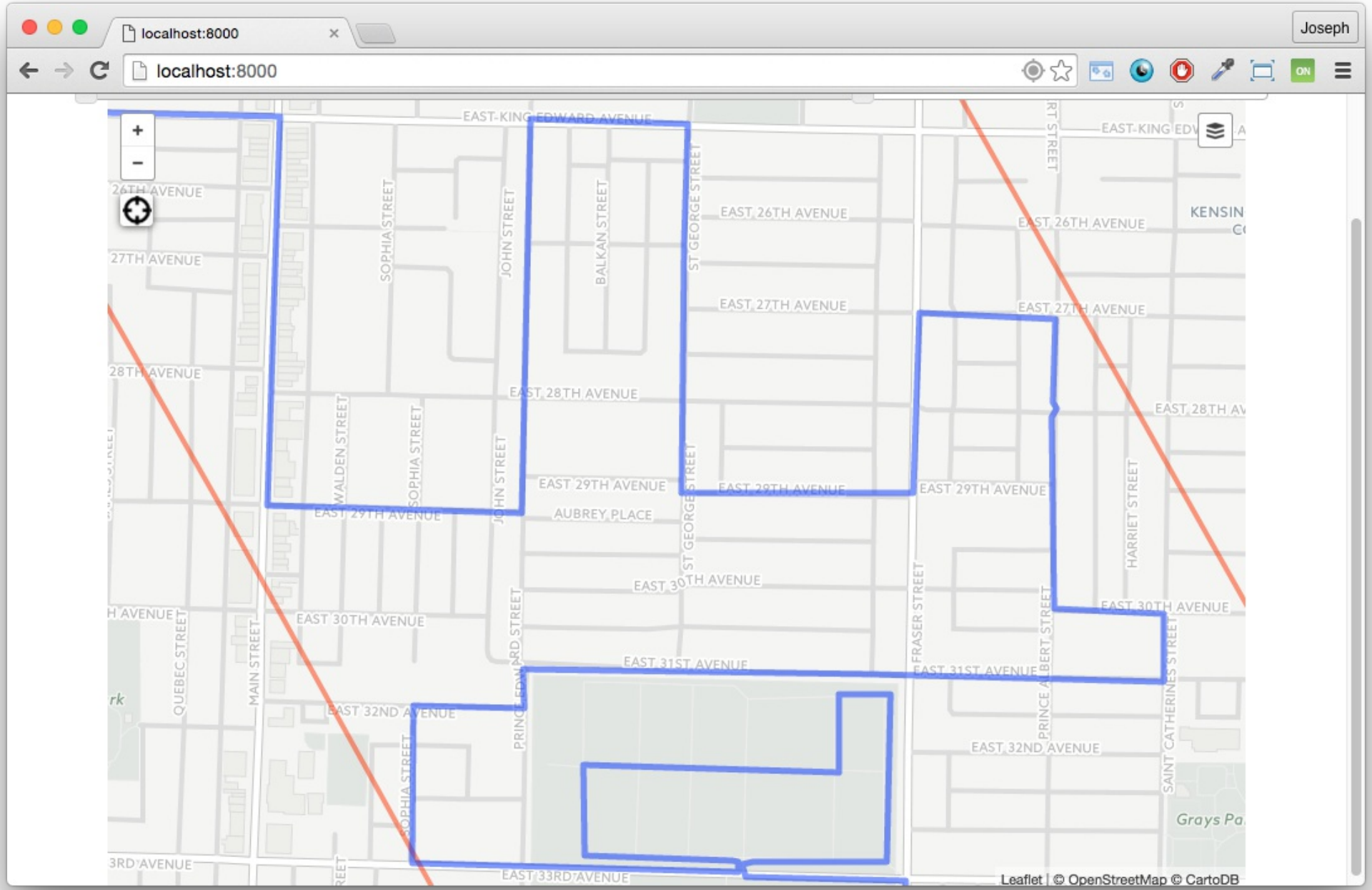
localhost:8000
Joseph
localhost:8000
EAST KING EDWARD AVENUE
26TH AVENUE
27TH AVENUE
28TH AVENUE
EAST 26TH AVENUE
EAST 27TH AVENUE
EAST 28TH AVENUE
EAST 29TH AVENUE
AUBREY PLACE
EAST 30TH AVENUE
EAST 31ST AVENUE
EAST 32ND AVENUE
EAST 33RD AVENUE
SOPHIA STREET
JOHN STREET
BALKAN STREET
ST GEORGE STREET
WALDEN STREET
QUEBEC STREET
MAIN STREET
PRINCE EDWARD STREET
FRASER STREET
PRINCE ALBERT STREET
HARRIET STREET
SAINT CATHERINES STREET
KENSIN
Leaflet | © OpenStreetMap © CartoDB

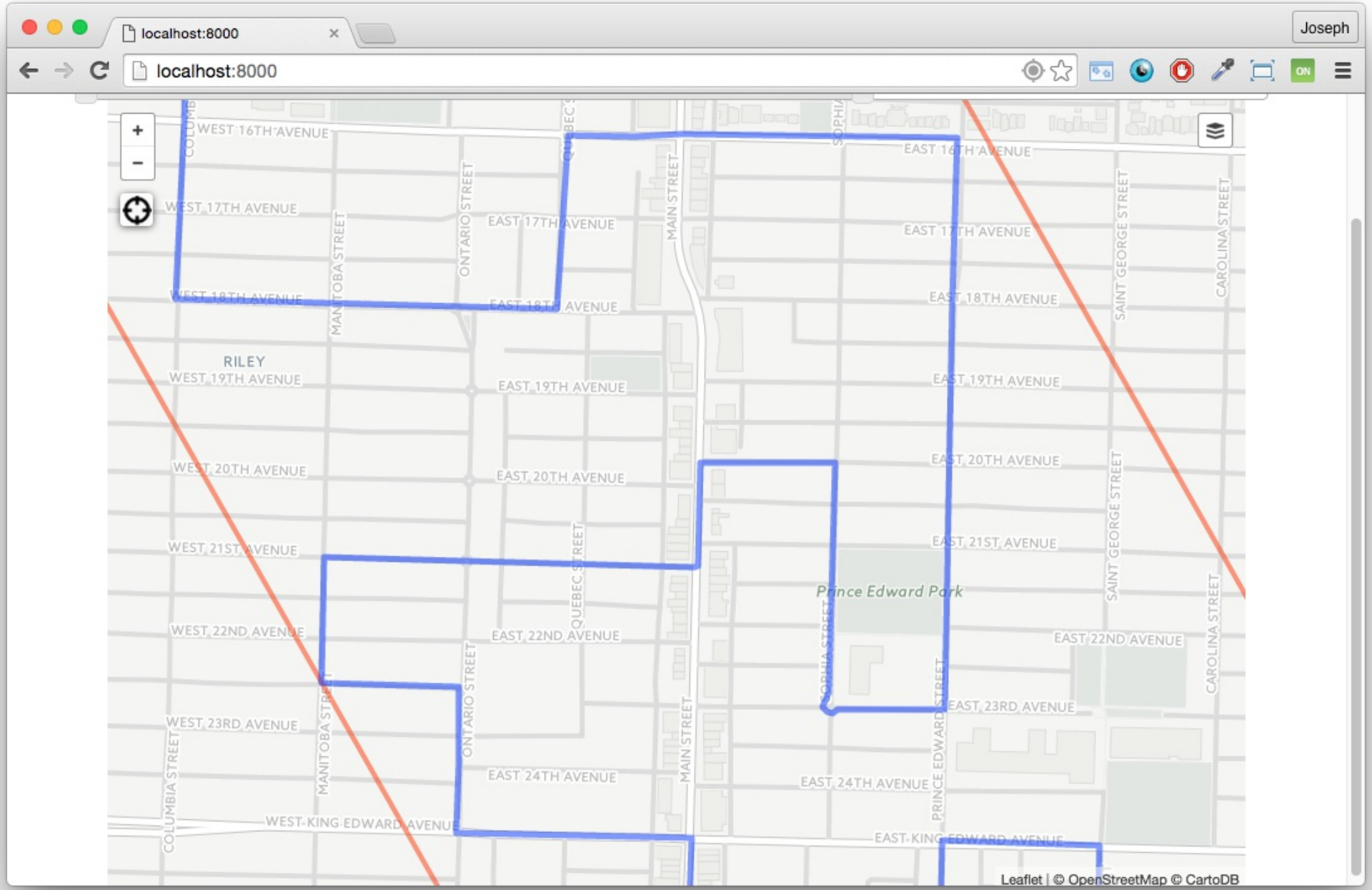
localhost:8000
Joseph
localhost:8000
WEST 16TH AVENUE
EAST 16TH AVENUE
WEST 17TH AVENUE
EAST 17TH AVENUE
WEST 18TH AVENUE
EAST 18TH AVENUE
RILEY
WEST 19TH AVENUE
EAST 19TH AVENUE
WEST 20TH AVENUE
EAST 20TH AVENUE
WEST 21ST AVENUE
EAST 21ST AVENUE
Prince Edward Park
WEST 22ND AVENUE
EAST 22ND AVENUE
WEST 23RD AVENUE
EAST 23RD AVENUE
EAST 24TH AVENUE
WEST KING EDWARD AVENUE
EAST KING EDWARD AVENUE
COLUMBIA STREET
MANITOBA STREET
ONTARIO STREET
QUEBEC STREET
MAIN STREET
SOPHIA STREET
PRINCE EDWARD STREET
SAINT GEORGE STREET
CAROLINA STREET
Leaflet | © OpenStreetMap © CartoDB

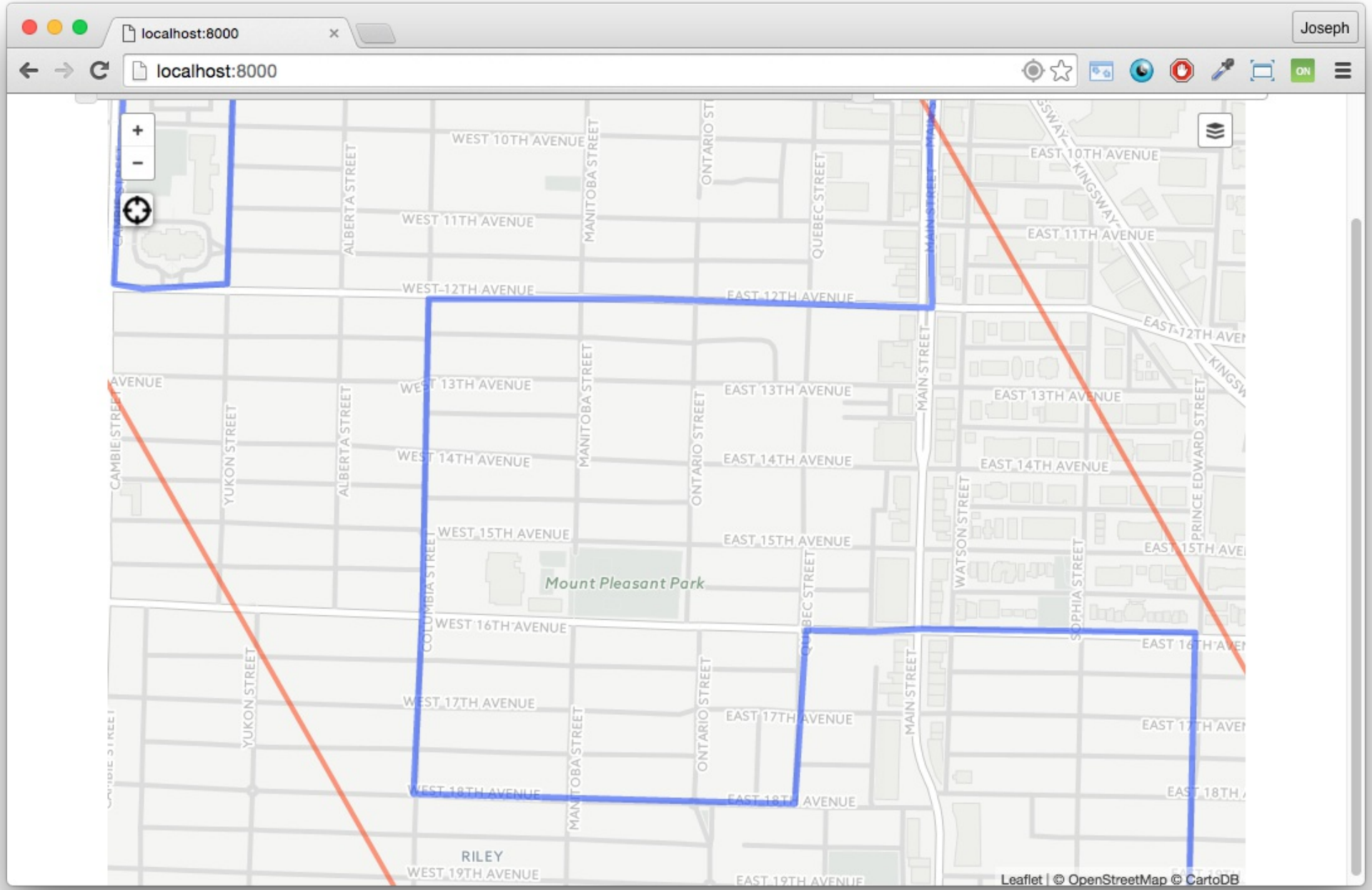
localhost:8000
Joseph
localhost:8000
WEST 10TH AVENUE
WEST 11TH AVENUE
WEST 12TH AVENUE
EAST 12TH AVENUE
WEST 13TH AVENUE
EAST 13TH AVENUE
WEST 14TH AVENUE
EAST 14TH AVENUE
WEST 15TH AVENUE
EAST 15TH AVENUE
WEST 16TH AVENUE
WEST 17TH AVENUE
EAST 17TH AVENUE
WEST 18TH AVENUE
EAST 18TH AVENUE
WEST 19TH AVENUE
EAST 19TH AVENUE
EAST 10TH AVENUE
EAST 11TH AVENUE
CAMBIE STREET
YUKON STREET
ALBERTA STREET
MANITOBA STREET
ONTARIO STREET
QUEBEC STREET
MAIN STREET
WATSON STREET
SOPHIA STREET
PRINCE EDWARD STREET
COLUMBIA STREET
Mount Pleasant Park
RILEY
Leaflet | © OpenStreetMap © CartoDB

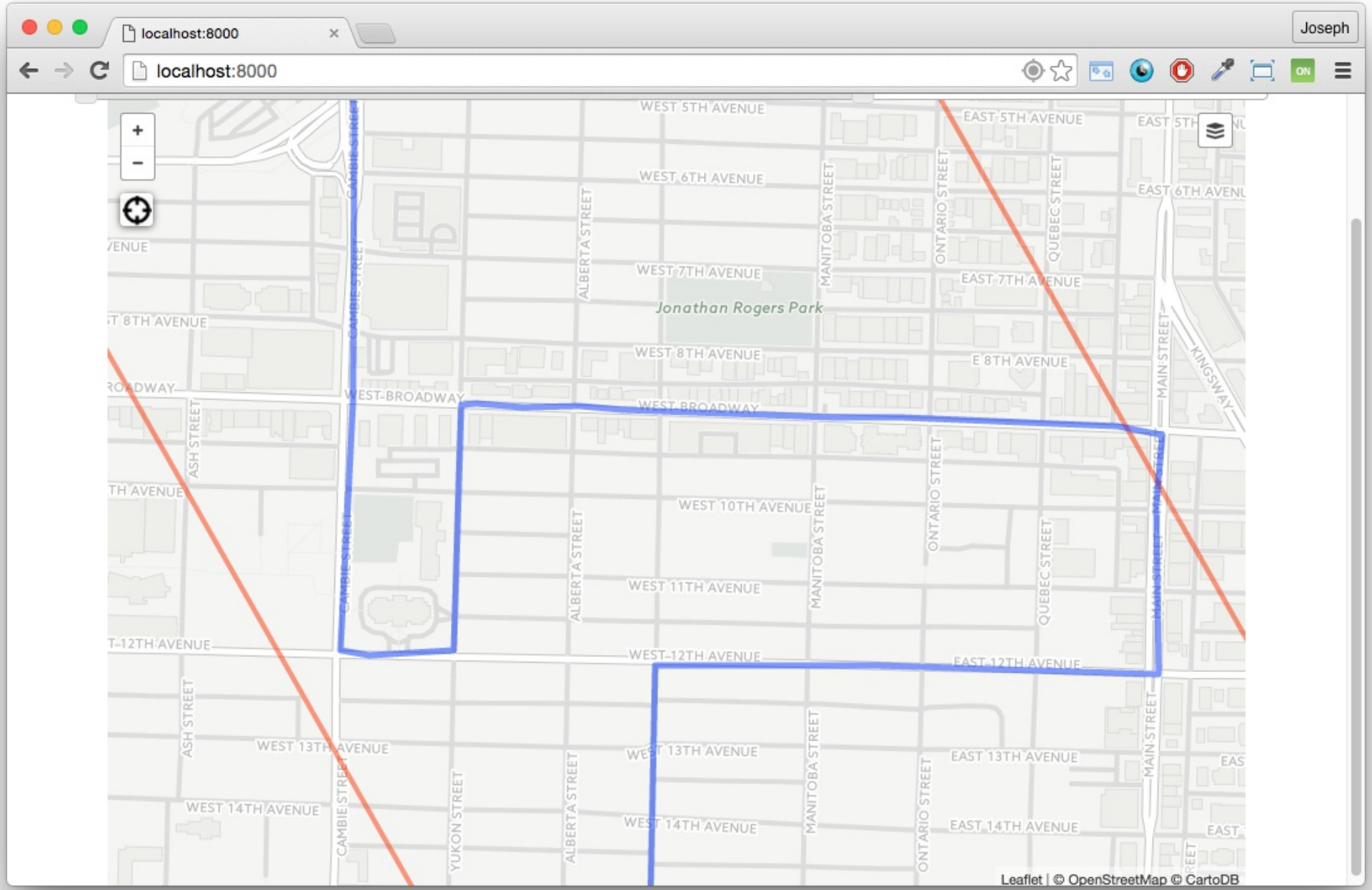
localhost:8000
Joseph
localhost:8000
WEST 5TH AVENUE
EAST 5TH AVENUE
WEST 6TH AVENUE
EAST 6TH AVENUE
WEST 7TH AVENUE
EAST 7TH AVENUE
Jonathan Rogers Park
WEST 8TH AVENUE
E 8TH AVENUE
WEST BROADWAY
WEST 10TH AVENUE
WEST 11TH AVENUE
WEST 12TH AVENUE
EAST 12TH AVENUE
WEST 13TH AVENUE
EAST 13TH AVENUE
WEST 14TH AVENUE
EAST 14TH AVENUE
CAMBIE STREET
ALBERTA STREET
MANITOBA STREET
ONTARIO STREET
QUEBEC STREET
MAIN STREET
KINGSWAY
ASH STREET
YUKON STREET
Leaflet | © OpenStreetMap © CartoDB

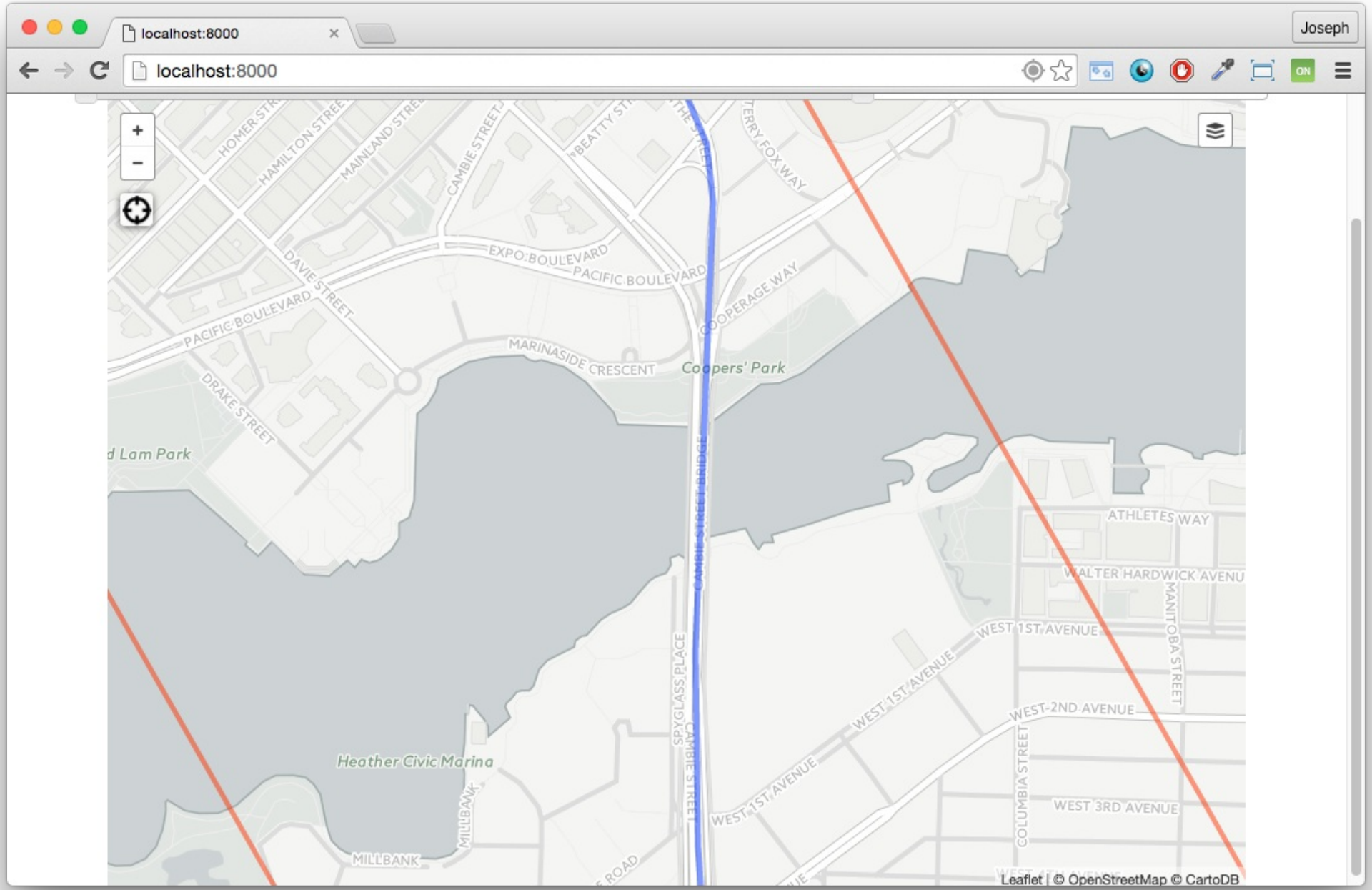
localhost:8000
Joseph
localhost:8000
HOMER STREET
HAMILTON STREET
MAINLAND STREET
CAMBIE STREET
BEATTY STREET
TERRY FOX WAY
EXPO BOULEVARD
PACIFIC BOULEVARD
DAVIE STREET
COOPERAGE WAY
MARINASIDE CRESCENT
Coopers' Park
DRAKE STREET
d Lam Park
CAMBIE STREET BRIDGE
ATHLETES WAY
WALTER HARDWICK AVENU
MANITOBA STREET
WEST 1ST AVENUE
WEST 2ND AVENUE
WEST 3RD AVENUE
COLUMBIA STREET
SPYGLASS PLACE
Heather Civic Marina
MILLBANK
Leaflet | © OpenStreetMap © CartoDB

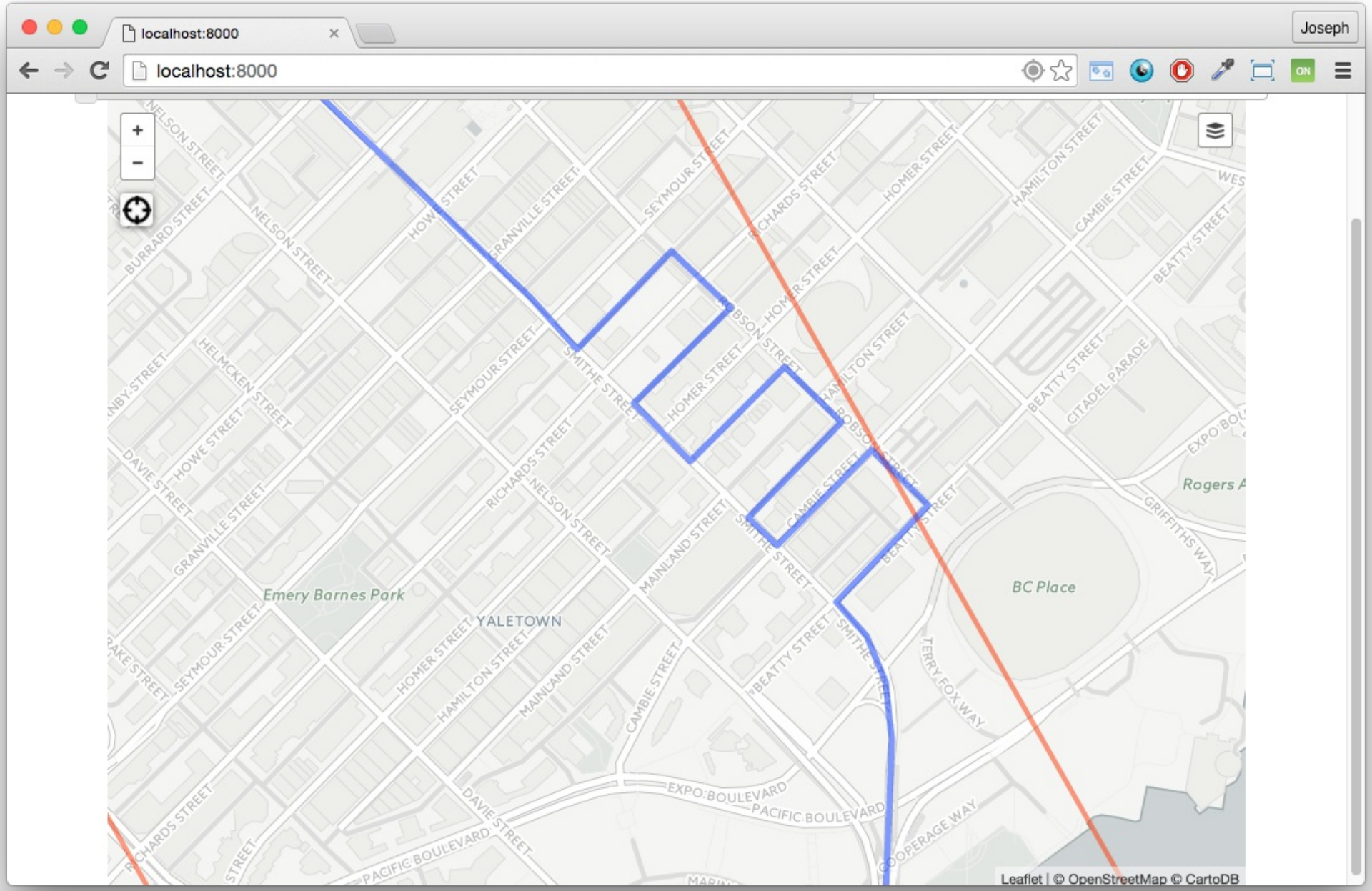
localhost:8000
Joseph
localhost:8000
NELSON STREET
BURRARD STREET
HOWE STREET
GRANVILLE STREET
SEYMOUR STREET
RICHARDS STREET
HOMER STREET
HAMILTON STREET
CAMBIE STREET
BEATTY STREET
ROBSON STREET
SMITHE STREET
HELMCKEN STREET
DAVIE STREET
MAINLAND STREET
CITADEL PARADE
GRIFFITHS WAY
TERRY FOX WAY
COOPERAGE WAY
EXPO BOULEVARD
PACIFIC BOULEVARD
Emery Barnes Park
YALETOWN
BC Place
Leaflet | © OpenStreetMap © CartoDB

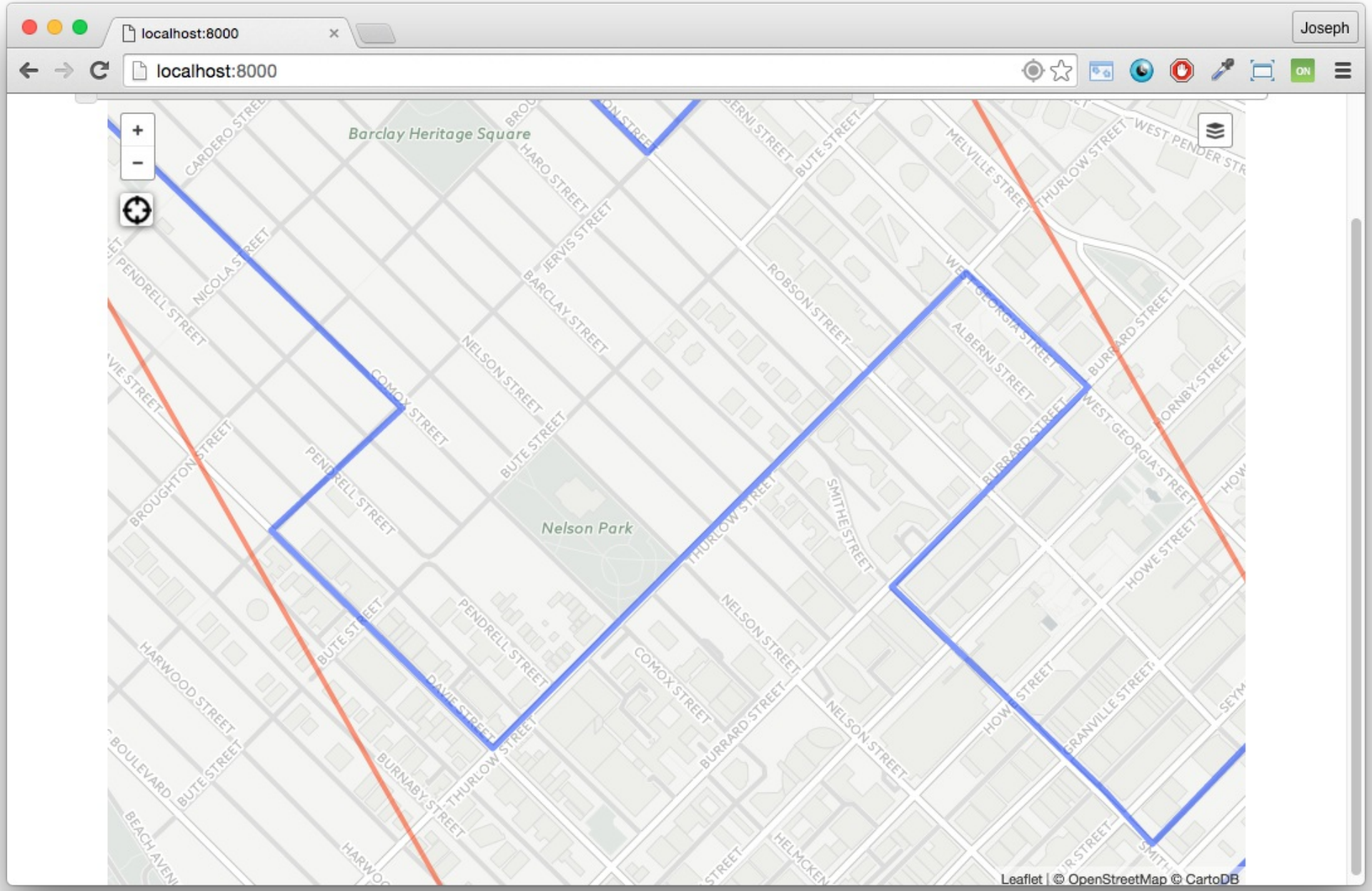
localhost:8000
Joseph
localhost:8000
Barclay Heritage Square
Nelson Park
CARDERO STREET
HARO STREET
JERVIS STREET
BARCLAY STREET
NICOLA STREET
PENDRELL STREET
NELSON STREET
COMOX STREET
BUTE STREET
ROBSON STREET
THURLOW STREET
SMITHE STREET
ALBERNI STREET
BURRARD STREET
WEST GEORGIA STREET
HOWE STREET
GRANVILLE STREET
MELVILLE STREET
WEST PENDER STREET
BROUGHTON STREET
HARWOOD STREET
DAVIE STREET
BURNABY STREET
BOULEVARD
BEACH AVENUE
HELMCKEN
Leaflet | © OpenStreetMap © CartoDB

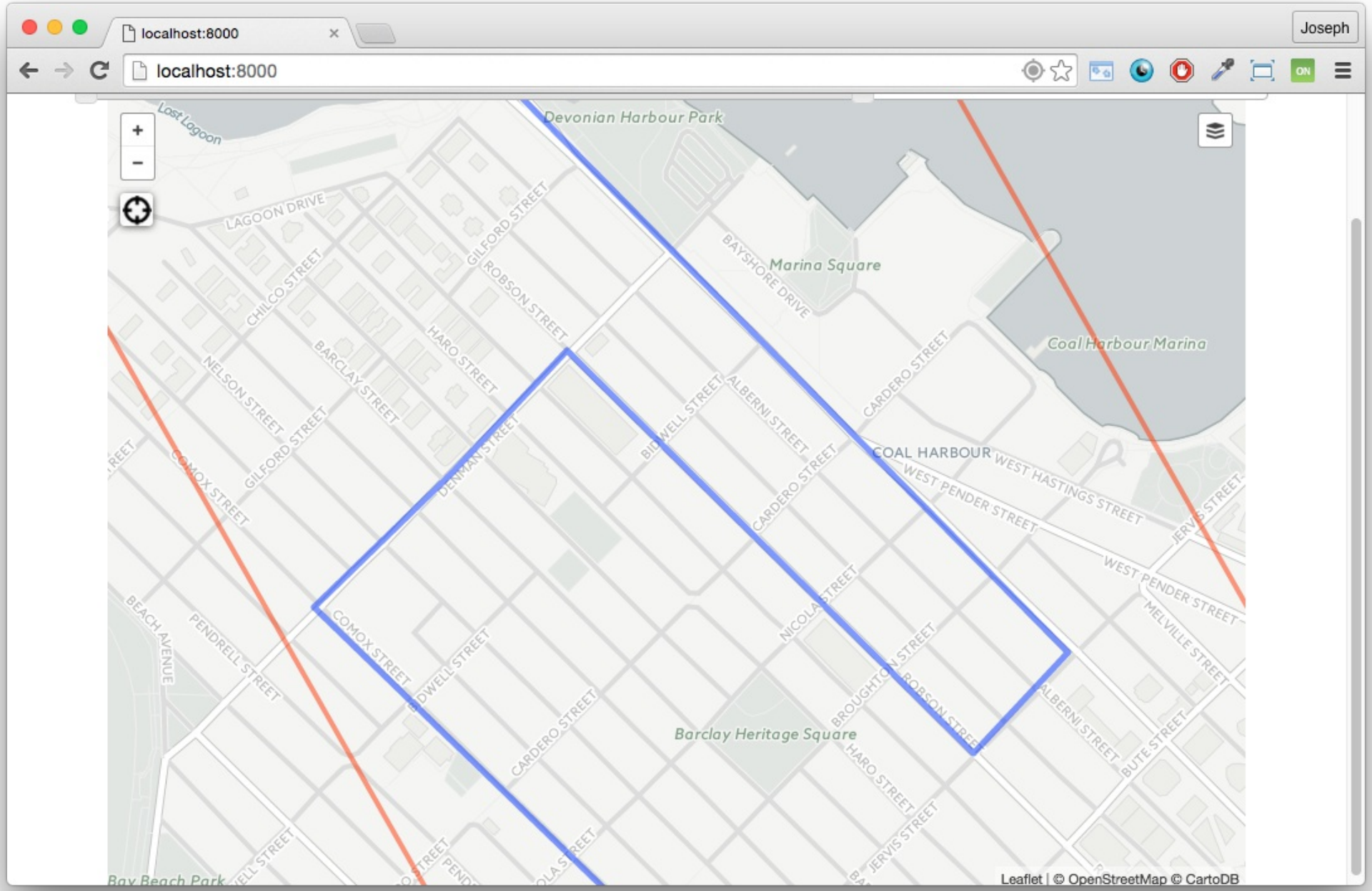
localhost:8000
Joseph
localhost:8000
Devonian Harbour Park
Lost Lagoon
LAGOON DRIVE
GILFORD STREET
ROBSON STREET
CHILCO STREET
HARO STREET
BARCLAY STREET
NELSON STREET
GILFORD STREET
COMOX STREET
DENMAN STREET
BIDWELL STREET
ALBERNI STREET
CARDERO STREET
BAYSHORE DRIVE
Marina Square
Coal Harbour Marina
COAL HARBOUR
WEST HASTINGS STREET
WEST PENDER STREET
JERVIS STREET
MELVILLE STREET
NICOLA STREET
BROUGHTON STREET
BUTE STREET
BEACH AVENUE
PENDRELL STREET
Barclay Heritage Square
Bay Beach Park
Leaflet | © OpenStreetMap © CartoDB

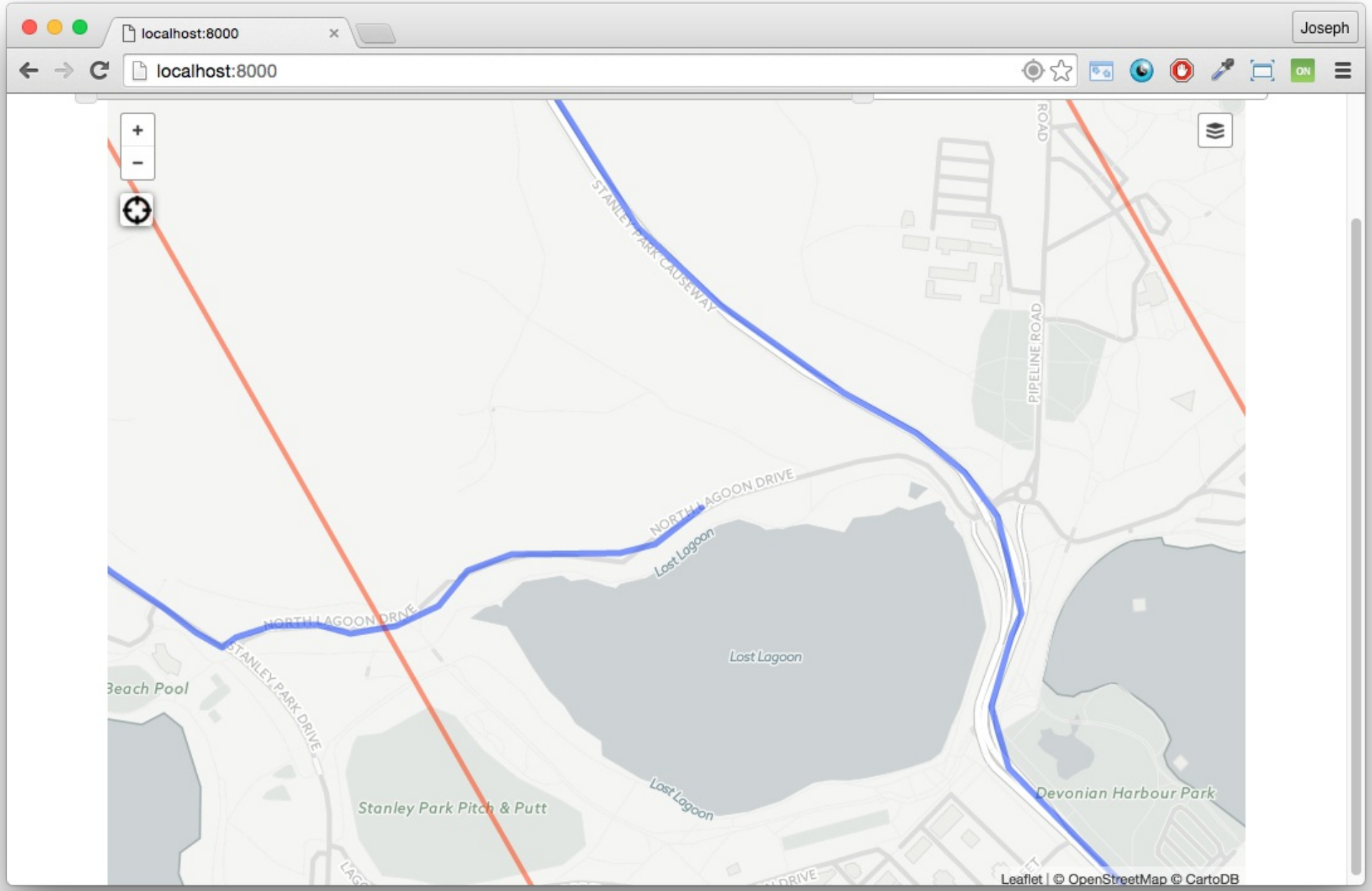
localhost:8000
Joseph
localhost:8000
STANLEY PARK CAUSEWAY
PIPELINE ROAD
NORTH LAGOON DRIVE
Lost Lagoon
Lost Lagoon
Lost Lagoon
STANLEY PARK DRIVE
Beach Pool
Stanley Park Pitch & Putt
Devonian Harbour Park
Leaflet | © OpenStreetMap © CartoDB

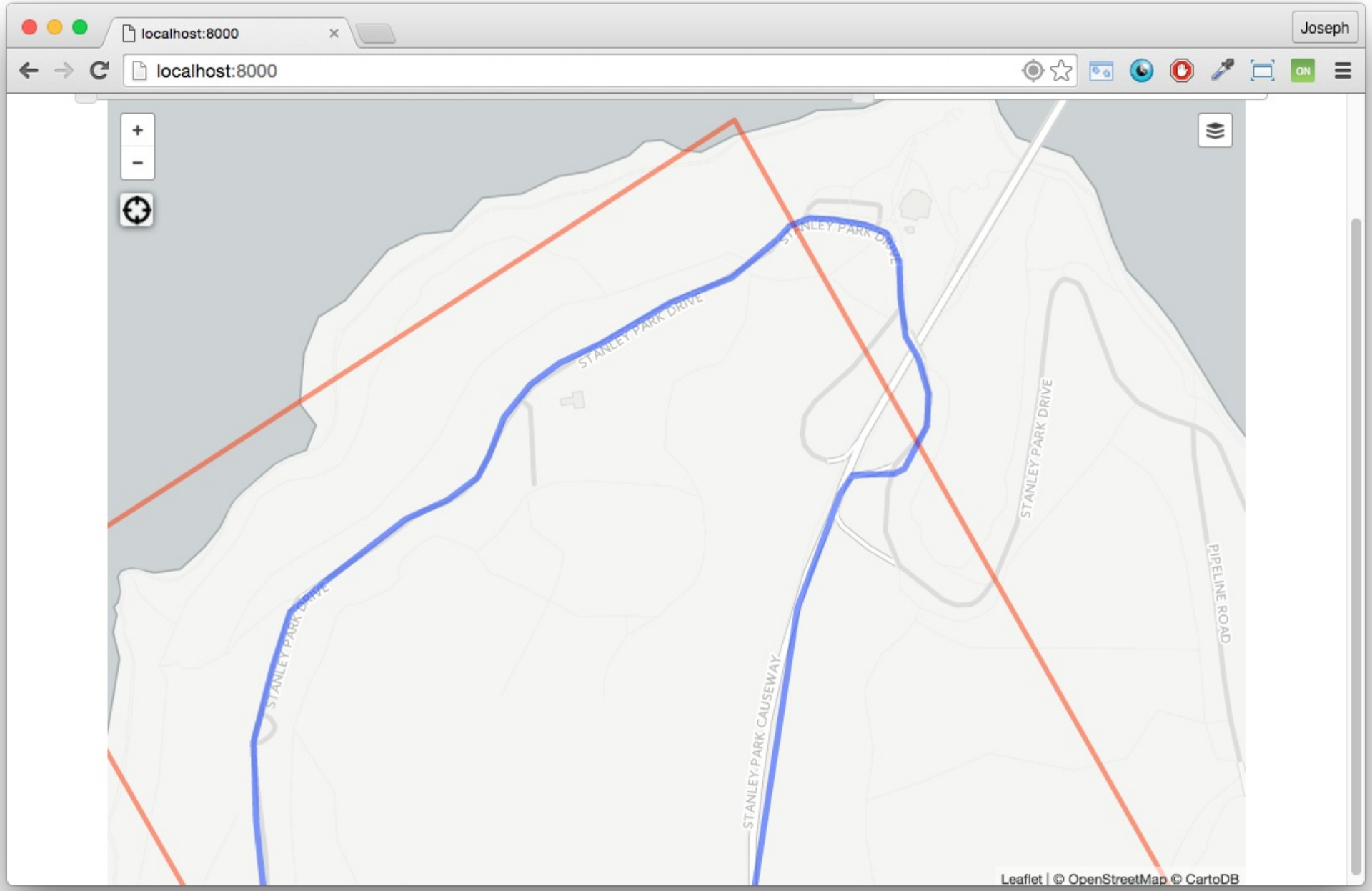
localhost:8000
Joseph
localhost:8000
STANLEY PARK DRIVE
STANLEY PARK DRIVE
STANLEY PARK DRIVE
STANLEY PARK DRIVE
STANLEY PARK CAUSEWAY
PIPELINE ROAD
Leaflet | © OpenStreetMap © CartoDB

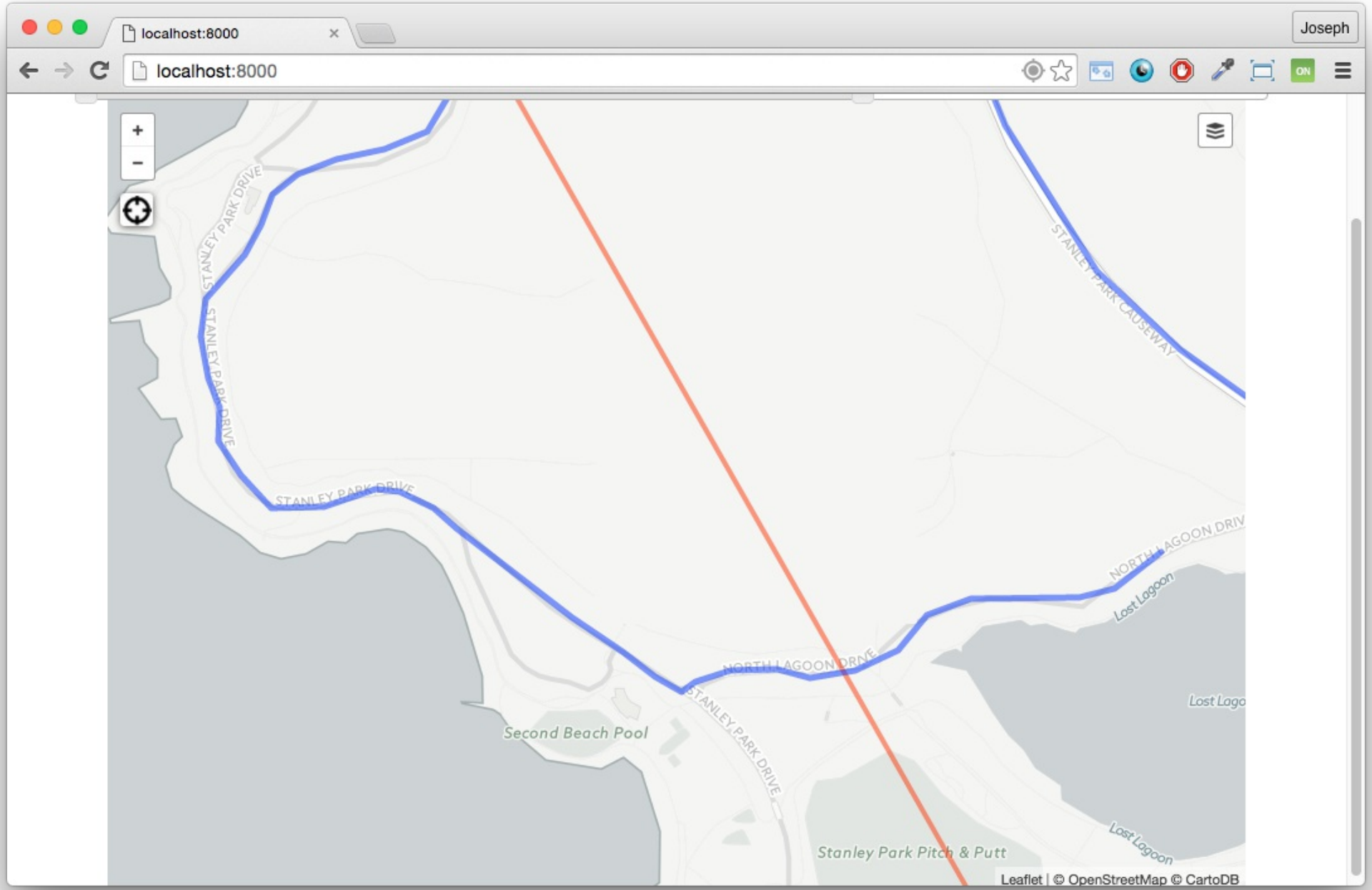
localhost:8000
Joseph
localhost:8000
STANLEY PARK DRIVE
STANLEY PARK DRIVE
STANLEY PARK DRIVE
STANLEY PARK CAUSEWAY
NORTH LAGOON DRIVE
NORTH LAGOON DRIVE
Lost Lagoon
Lost Lagoon
Lost Lagoon
Second Beach Pool
Stanley Park Pitch & Putt
Leaflet | © OpenStreetMap © CartoDB

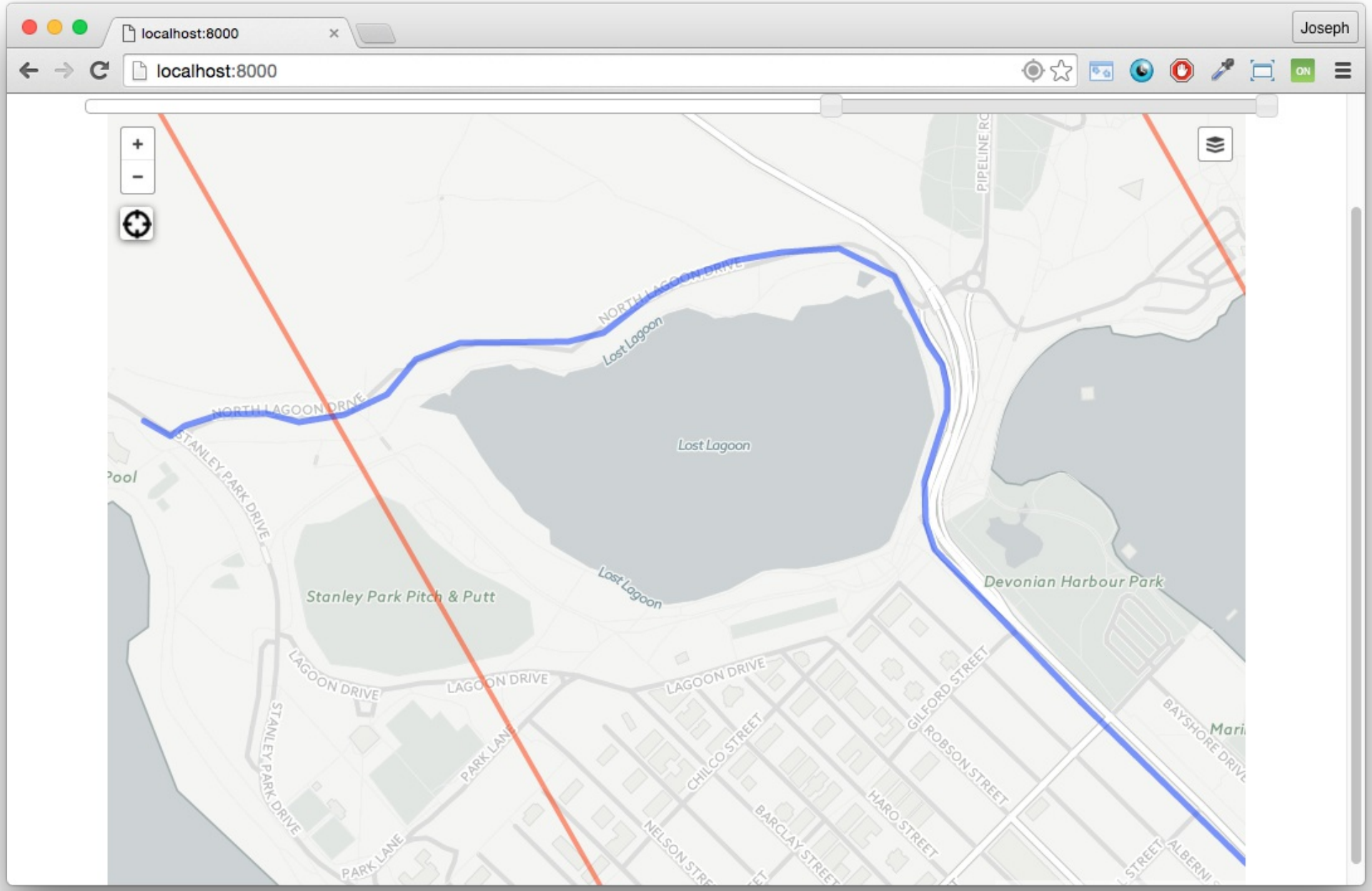
localhost:8000
Joseph
localhost:8000
NORTH LAGOON DRIVE
Lost Lagoon
Lost Lagoon
Lost Lagoon
STANLEY PARK DRIVE
Stanley Park Pitch & Putt
Devonian Harbour Park
LAGOON DRIVE
LAGOON DRIVE
LAGOON DRIVE
PARK LANE
PARK LANE
CHILCO STREET
GILFORD STREET
ROBSON STREET
HARO STREET
BARCLAY STREET
NELSON STREET
BAYSHORE DRIVE
PIPELINE RO

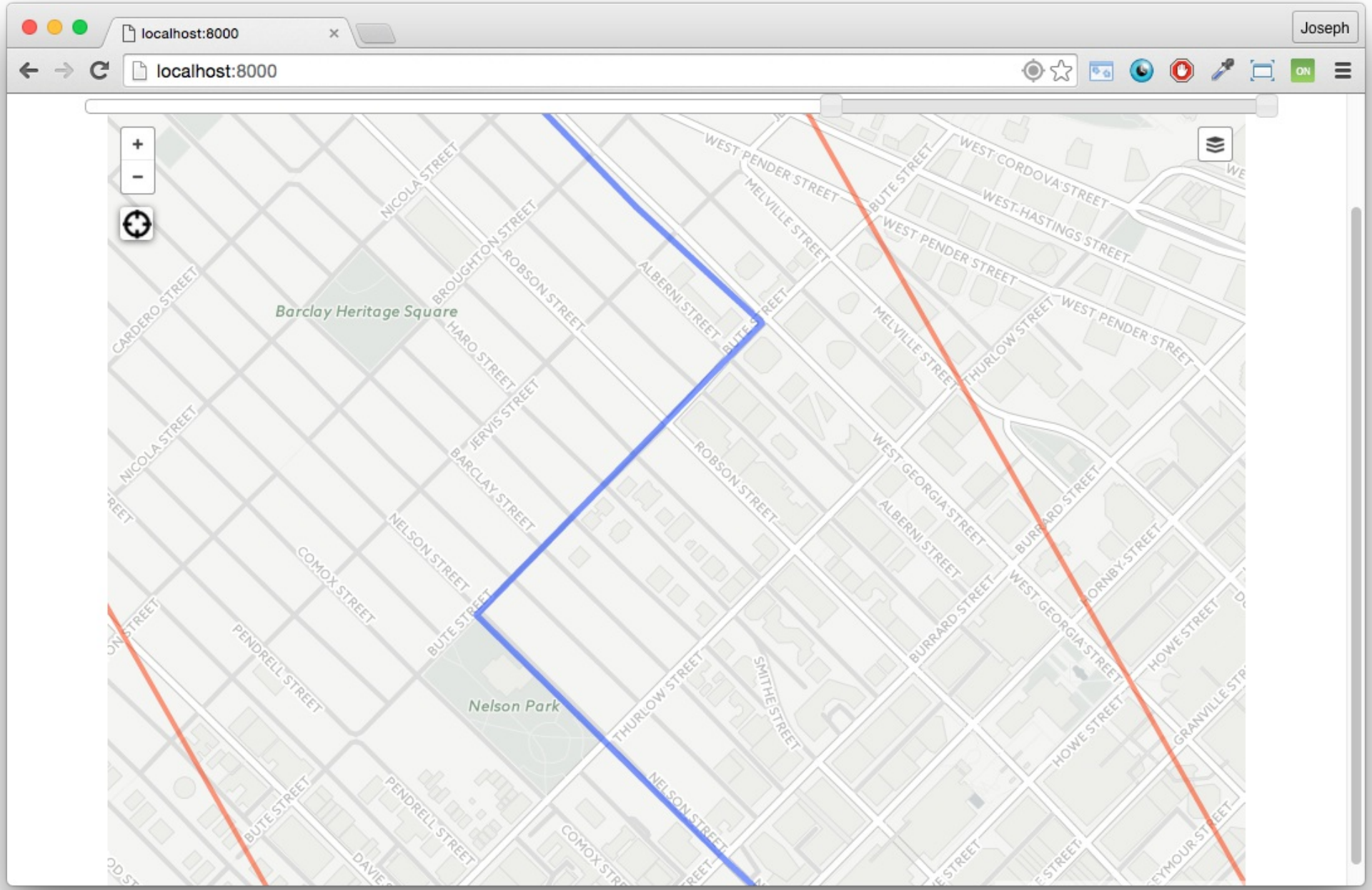
localhost:8000
Joseph
localhost:8000
Barclay Heritage Square
Nelson Park
NICOLA STREET
BROUGHTON STREET
ROBSON STREET
ALBERNI STREET
WEST PENDER STREET
MELVILLE STREET
BUTE STREET
WEST CORDOVA STREET
WEST HASTINGS STREET
CARDERO STREET
HARO STREET
JERVIS STREET
BARCLAY STREET
THURLOW STREET
WEST GEORGIA STREET
BURRARD STREET
NELSON STREET
COMOX STREET
PENDRELL STREET
SMITHE STREET
HORNBY STREET
HOWE STREET
GRANVILLE STREET

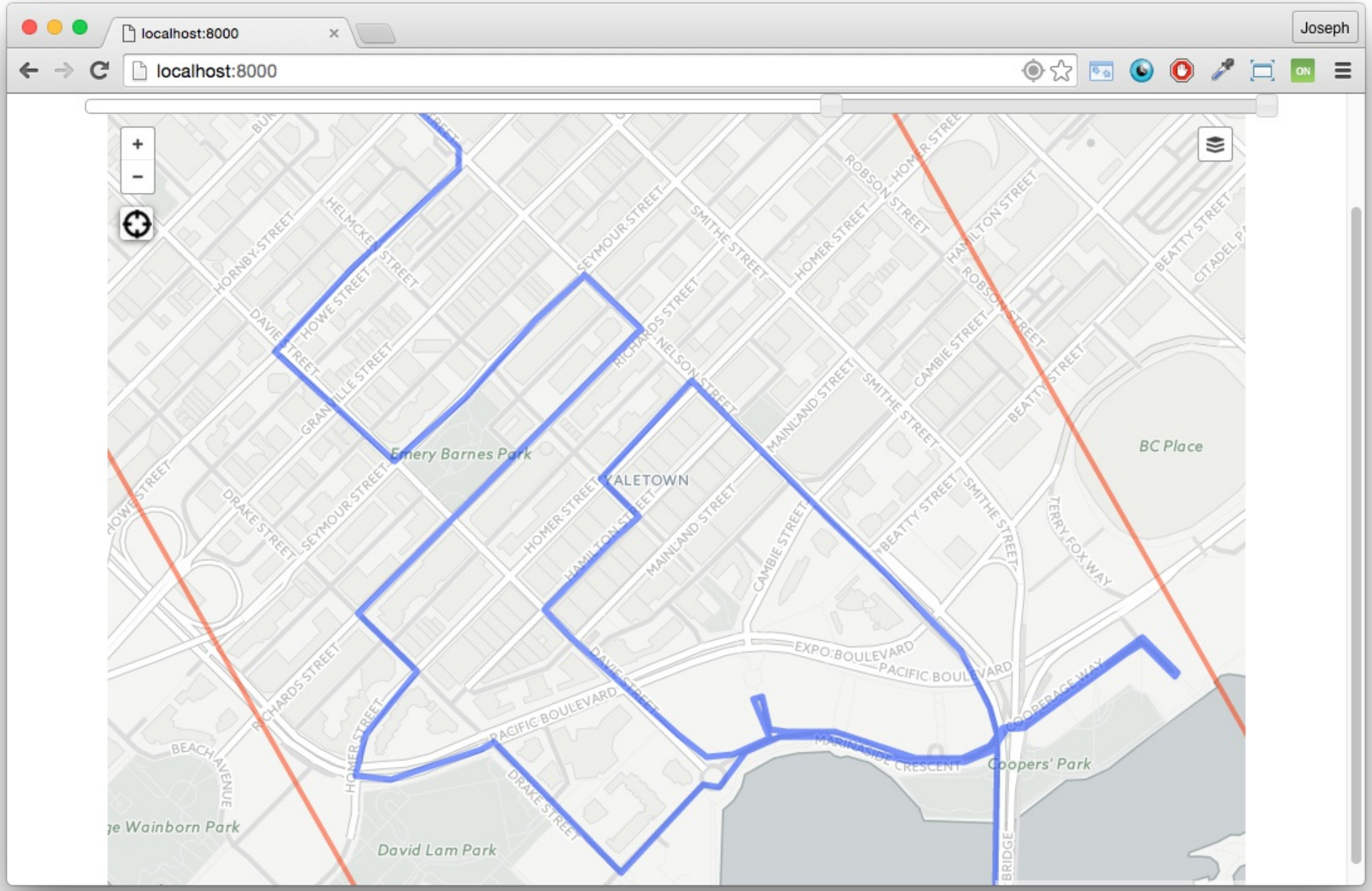
localhost:8000
Joseph
localhost:8000
Emery Barnes Park
YALETOWN
BC Place
Coopers' Park
David Lam Park
Wainborn Park
HORNBY STREET
HELMCKEN STREET
HOWE STREET
DAVIE STREET
GRANVILLE STREET
SEYMOUR STREET
DRAKE STREET
RICHARDS STREET
NELSON STREET
SMITHE STREET
HOMER STREET
ROBSON STREET
HAMILTON STREET
MAINLAND STREET
CAMBIE STREET
BEATTY STREET
TERRY FOX WAY
EXPO BOULEVARD
PACIFIC BOULEVARD
MARINASIDE CRESCENT
COOPERAGE WAY
BEACH AVENUE
BRIDGE

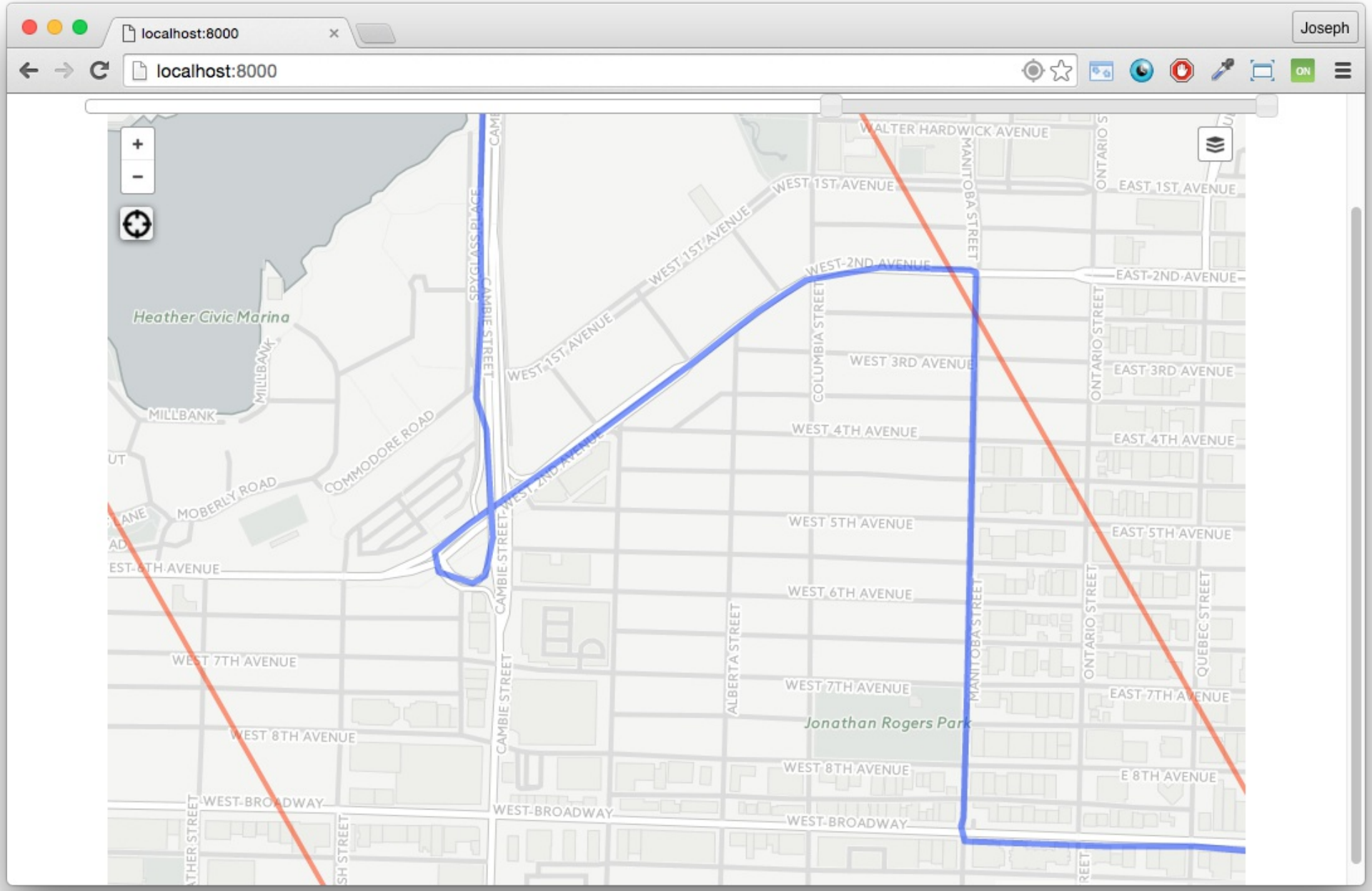
localhost:8000
Joseph
localhost:8000
Heather Civic Marina
MILLBANK
COMMODORE ROAD
MOBERLY ROAD
SPYGLASS PLACE
CAMBIE STREET
WALTER HARDWICK AVENUE
WEST 1ST AVENUE
EAST 1ST AVENUE
WEST 2ND AVENUE
EAST 2ND AVENUE
WEST 3RD AVENUE
EAST 3RD AVENUE
WEST 4TH AVENUE
EAST 4TH AVENUE
WEST 5TH AVENUE
EAST 5TH AVENUE
WEST 6TH AVENUE
WEST 7TH AVENUE
EAST 7TH AVENUE
WEST 8TH AVENUE
E 8TH AVENUE
WEST-BROADWAY
COLUMBIA STREET
MANITOBA STREET
ONTARIO STREET
ALBERTA STREET
QUEBEC STREET
Jonathan Rogers Park

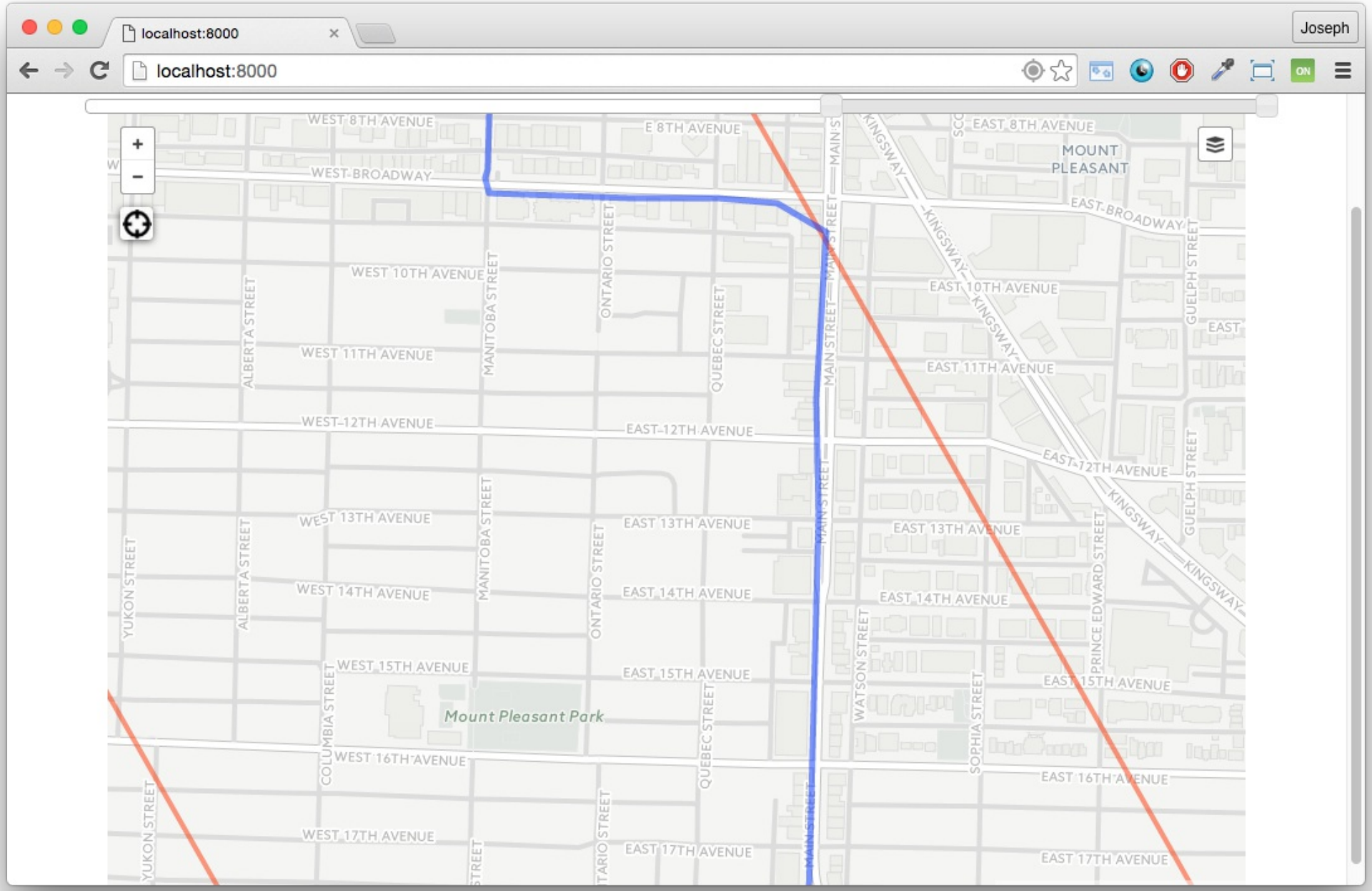
localhost:8000
Joseph
localhost:8000
WEST 8TH AVENUE
E 8TH AVENUE
EAST 8TH AVENUE
MOUNT PLEASANT
WEST BROADWAY
EAST BROADWAY
WEST 10TH AVENUE
EAST 10TH AVENUE
WEST 11TH AVENUE
EAST 11TH AVENUE
WEST 12TH AVENUE
EAST 12TH AVENUE
WEST 13TH AVENUE
EAST 13TH AVENUE
WEST 14TH AVENUE
EAST 14TH AVENUE
WEST 15TH AVENUE
EAST 15TH AVENUE
WEST 16TH AVENUE
EAST 16TH AVENUE
WEST 17TH AVENUE
EAST 17TH AVENUE
Mount Pleasant Park
ALBERTA STREET
MANITOBA STREET
ONTARIO STREET
QUEBEC STREET
MAIN STREET
KINGSWAY
GUELPH STREET
YUKON STREET
COLUMBIA STREET
WATSON STREET
SOPHIA STREET
PRINCE EDWARD STREET

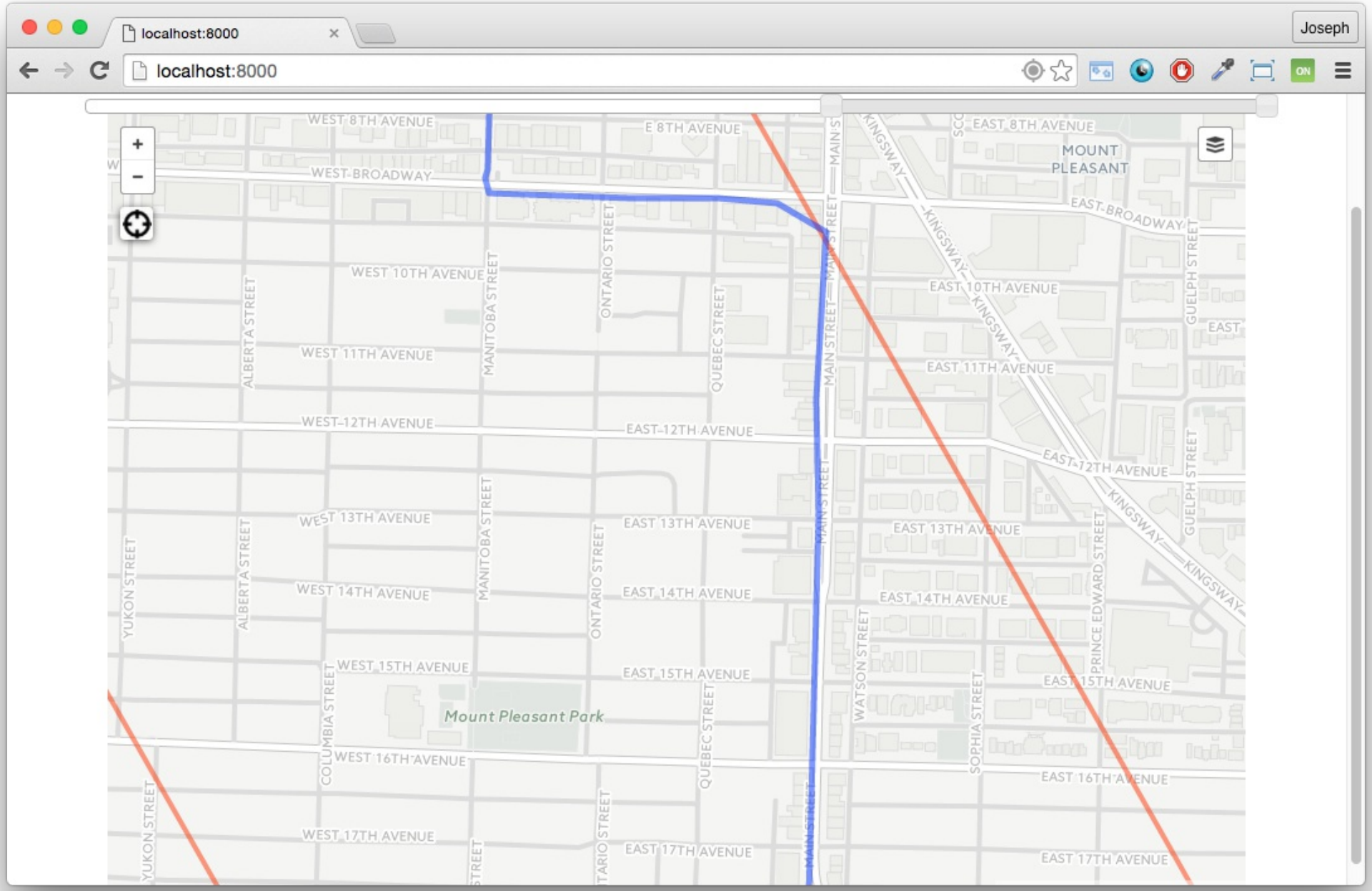
localhost:8000
Joseph
localhost:8000
WEST 8TH AVENUE
E 8TH AVENUE
EAST 8TH AVENUE
MOUNT PLEASANT
WEST BROADWAY
EAST BROADWAY
WEST 10TH AVENUE
EAST 10TH AVENUE
WEST 11TH AVENUE
EAST 11TH AVENUE
WEST 12TH AVENUE
EAST 12TH AVENUE
WEST 13TH AVENUE
EAST 13TH AVENUE
WEST 14TH AVENUE
EAST 14TH AVENUE
WEST 15TH AVENUE
EAST 15TH AVENUE
WEST 16TH AVENUE
EAST 16TH AVENUE
WEST 17TH AVENUE
EAST 17TH AVENUE
Mount Pleasant Park
ALBERTA STREET
MANITOBA STREET
ONTARIO STREET
QUEBEC STREET
MAIN STREET
KINGSWAY
GUELPH STREET
YUKON STREET
COLUMBIA STREET
WATSON STREET
SOPHIA STREET
PRINCE EDWARD STREET

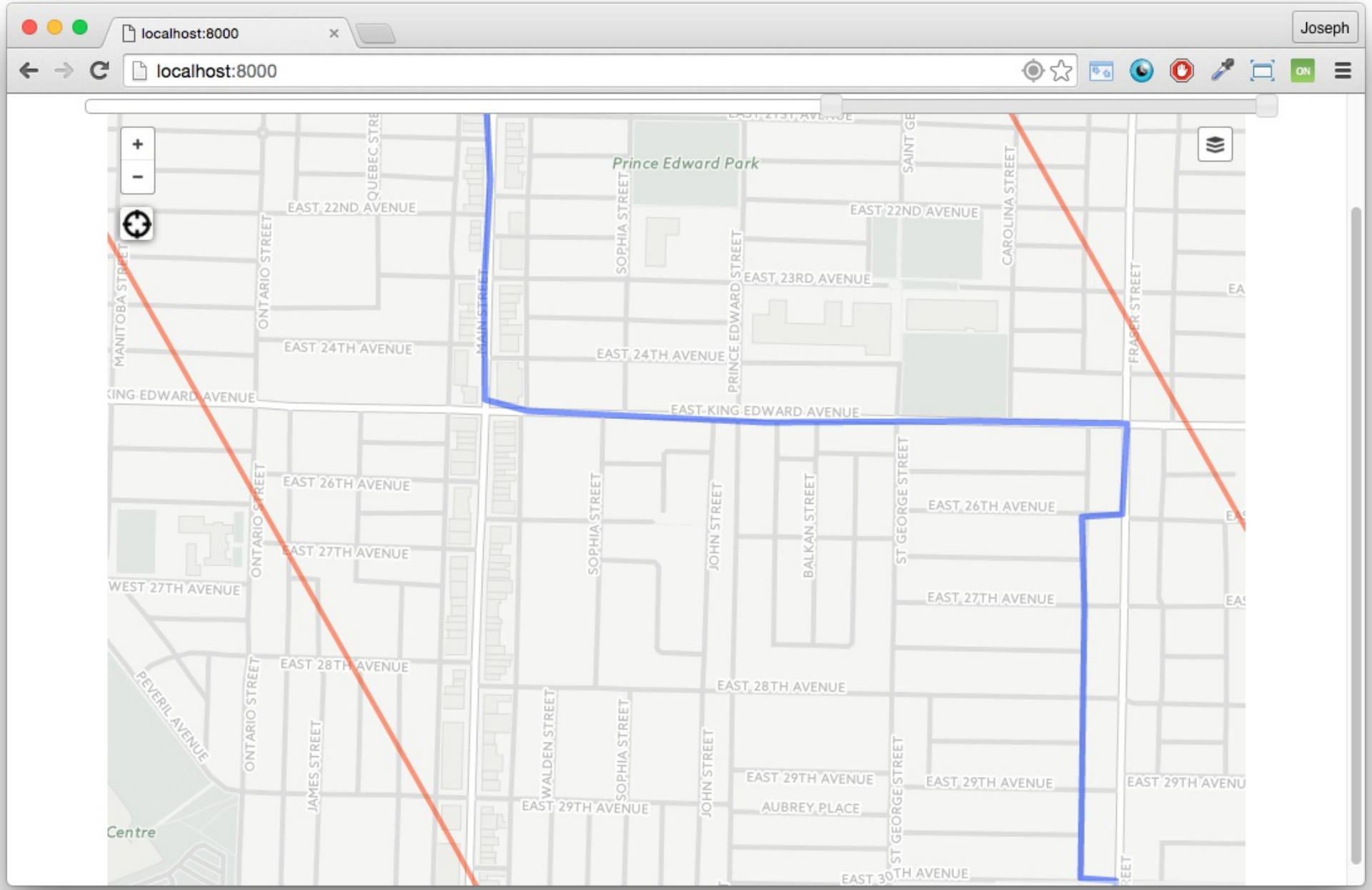
localhost:8000
Joseph
localhost:8000
Prince Edward Park
EAST 22ND AVENUE
EAST 23RD AVENUE
EAST 24TH AVENUE
EAST KING EDWARD AVENUE
EAST 26TH AVENUE
EAST 27TH AVENUE
EAST 28TH AVENUE
EAST 29TH AVENUE
AUBREY PLACE
QUEBEC STREET
ONTARIO STREET
MANITOBA STREET
MAIN STREET
SOPHIA STREET
PRINCE EDWARD STREET
SAINT GEORGE STREET
CAROLINA STREET
FRASER STREET
JOHN STREET
BALKAN STREET
WALDEN STREET
JAMES STREET
PEVERIL AVENUE
WEST 27TH AVENUE
Centre

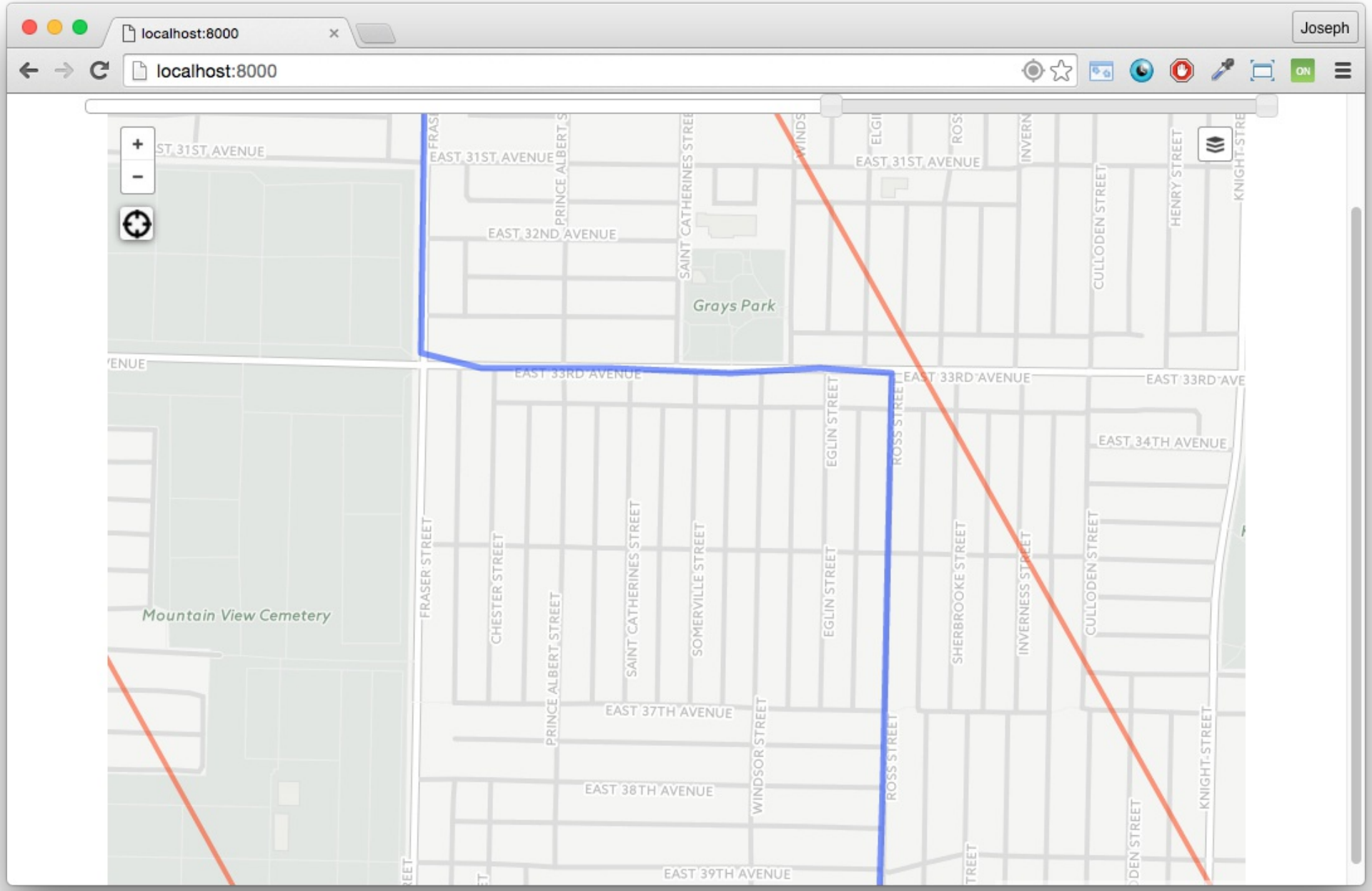
localhost:8000
Joseph
localhost:8000
EAST 31ST AVENUE
EAST 32ND AVENUE
EAST 33RD AVENUE
EAST 34TH AVENUE
EAST 37TH AVENUE
EAST 38TH AVENUE
EAST 39TH AVENUE
PRINCE ALBERT STREET
SAINT CATHERINES STREET
Grays Park
CULLODEN STREET
HENRY STREET
KNIGHT STREET
EGLIN STREET
ROSS STREET
SHERBROOKE STREET
INVERNESS STREET
FRASER STREET
CHESTER STREET
SOMERVILLE STREET
WINDSOR STREET
Mountain View Cemetery

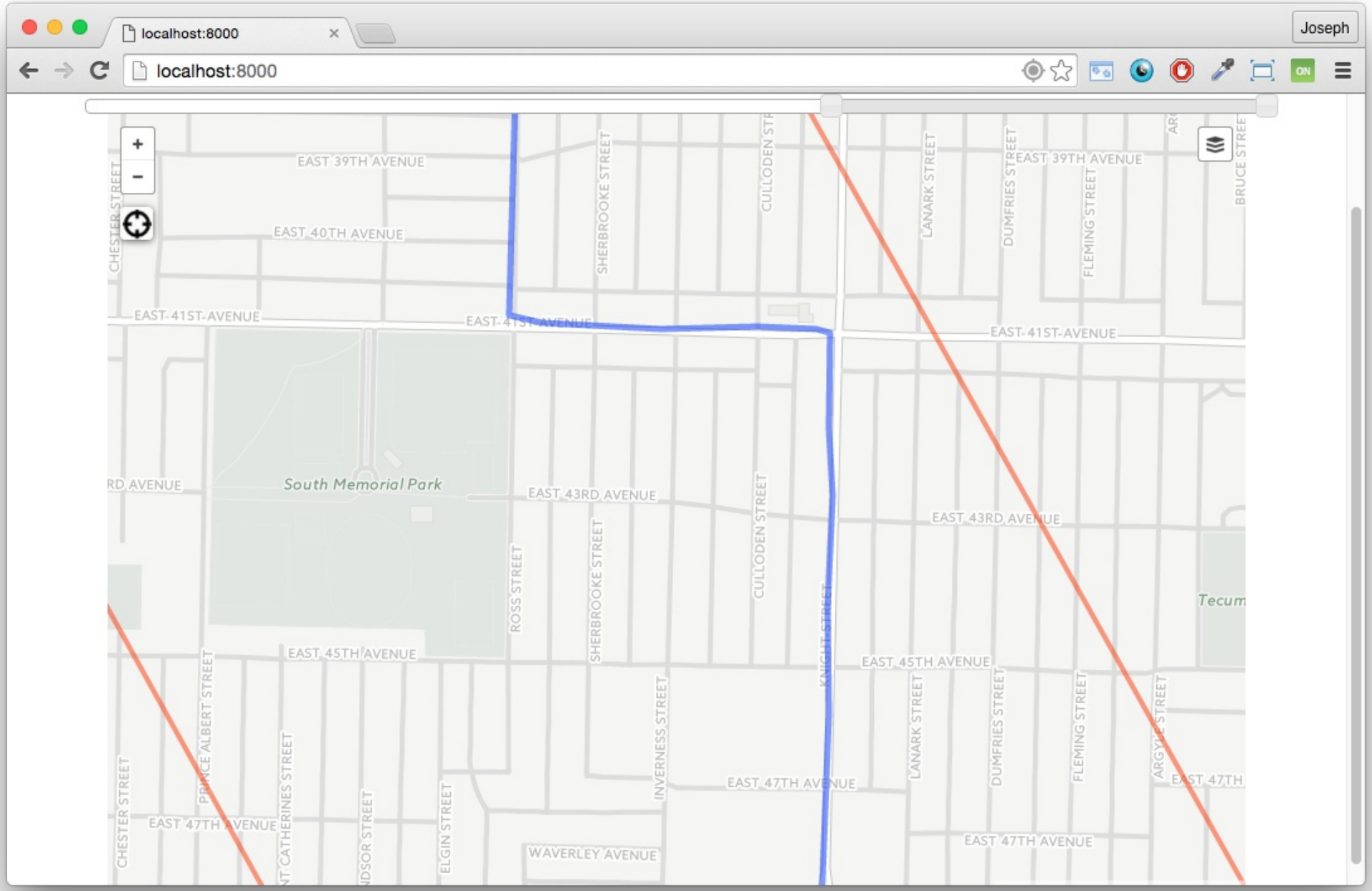
localhost:8000
Joseph
localhost:8000
EAST 39TH AVENUE
EAST 40TH AVENUE
EAST 41ST AVENUE
EAST 43RD AVENUE
EAST 45TH AVENUE
EAST 47TH AVENUE
WAVERLEY AVENUE
South Memorial Park
CHESTER STREET
SHERBROOKE STREET
CULLODEN STREET
LANARK STREET
DUMFRIES STREET
FLEMING STREET
BRUCE STREET
ROSS STREET
KNIGHT STREET
INVERNESS STREET
PRINCE ALBERT STREET
ELGIN STREET
Tecum

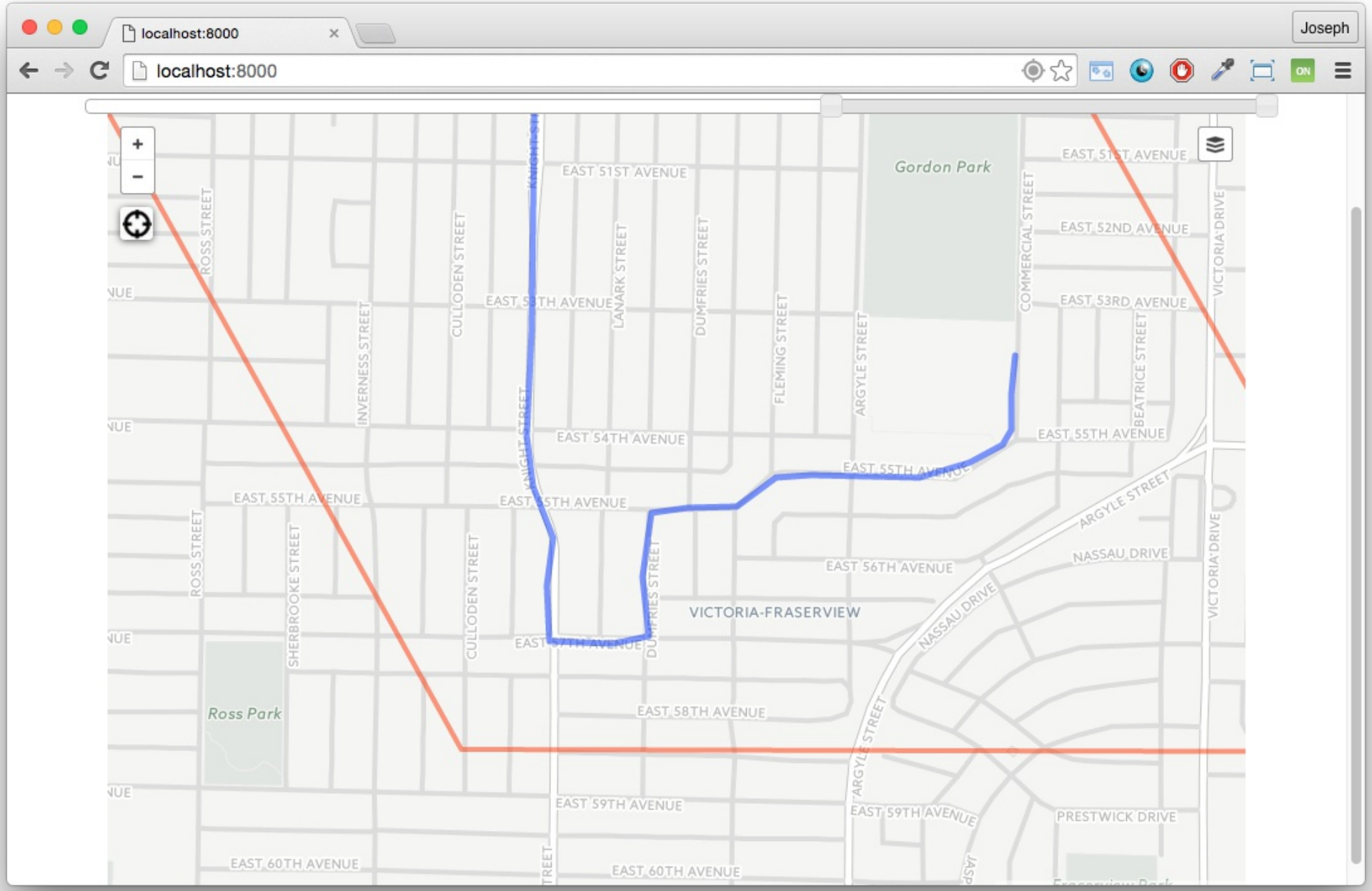
localhost:8000
Joseph
localhost:8000
Gordon Park
EAST 51ST AVENUE
EAST 52ND AVENUE
EAST 53RD AVENUE
EAST 54TH AVENUE
EAST 55TH AVENUE
EAST 56TH AVENUE
EAST 58TH AVENUE
EAST 59TH AVENUE
EAST 60TH AVENUE
ROSS STREET
INVERNESS STREET
CULLODEN STREET
KNIGHT STREET
LANARK STREET
DUMFRIES STREET
FLEMING STREET
ARGYLE STREET
COMMERCIAL STREET
BEATRICE STREET
VICTORIA DRIVE
NASSAU DRIVE
PRESTWICK DRIVE
SHERBROOKE STREET
VICTORIA-FRASERVIEW
Ross Park